SITE NUMBER: CLL00010

PACE#: MRLOS094238
FA#: 12731340
USID#: 331822

PROJECT: NSB
SITE TYPE: ROOFTOP
SITE ADDRESS: 13535 VICTORY BLVD.
VAN NUYS, CA 91401

CODE COMPLIANCE

ALL WORK AND MATERIALS SHALL BE PERFORMED AND INSTALLED IN ACCORDANCE WITH THE CURRENT EDITIONS OF THE FOLLOWING CODES AS ADOPTED BY THE LOCAL GOVERNING AUTHORITIES. NOTHING IN THESE PLANS IS TO BE CONSTRUCTED TO PERMIT WORK NOT CONFORMING TO THESE CODES.

1. 2022 CALIFORNIA ADMINISTRATIVE CODE
2. 2022 CALIFORNIA BUILDING CODE
3. 2022 CALIFORNIA ELECTRIC CODE
4. 2022 CALIFORNIA MECHANICAL CODE
5. 2022 CALIFORNIA PLUMBING CODE
6. 2022 CALIFORNIA FIRE CODE
7. ANY LOCAL BUILDING CODE AMENDMENTS
8. CITY/COUNTY ORDINANCES
9. ANSI / TIA-222 STRUCTURAL CODE
10. NFPA 780 - LIGHTING PROTECTION CODE

HANDICAP REQUIREMENTS:
FACILITY IS UNMANNED AND NOT FOR HUMAN HABITATION, AND IS EXEMPTED FROM ACCESSIBILITY REQUIREMENTS IN ACCORDANCE WITH 2022 CALIFORNIA BUILDING CODE SECTION 11B-203.5.

THIS FACILITY IS UNMANNED AND NOT FOR HUMAN HABITATION. A TECHNICIAN WILL VISIT THE SITE AS REQUIRED FOR ROUTINE MAINTENANCE. THE PROJECT WILL NOT RESULT IN IN ANY SIGNIFICANT DISTURBANCE OR EFFECT ON DRAINAGE. NO SANITARY SEWER SERVICE, POTABLE WATER, OR TRASH DISPOSAL IS REQUIRED AND NO COMMERCIAL SIGNAGE IS NEW.

GENERAL NOTES

THIS FACILITY IS UNMANNED AND NOT FOR HUMAN HABITATION. A TECHNICIAN WILL VISIT THE SITE AS REQUIRED FOR ROUTINE MAINTENANCE. THE PROJECT WILL NOT RESULT IN IN ANY SIGNIFICANT DISTURBANCE OR EFFECT ON DRAINAGE. NO SANITARY SEWER SERVICE, POTABLE WATER, OR TRASH DISPOSAL IS REQUIRED AND NO COMMERCIAL SIGNAGE IS NEW.

IF CONTRACTOR ENCOUNTERS CONDITIONS IN FIELD, EITHER UNFORESEEN OR IN SOME MANNER IN CONFLICT WITH THESE DRAWINGS, THE CONTRACTOR SHALL NOTIFY THE REGISTERED DESIGN PROFESSIONAL OF SUCH CONDITIONS IN WRITING AND SHALL ACKNOWLEDGE ANY WORK DONE OUTSIDE OF JURISDICTIONAL PERMITTED PLANS IS DONE AT CONTRACTORS OWN RISK.

FOR "SPECIAL INSPECTIONS" SPECIFIC TO THIS PROJECT PURSUANT TO CBC SECTION 1704.3, SEE SHEET T-4, "STATEMENT OF SPECIAL INSPECTIONS"

SUBCONTRACTOR SHALL VERIFY ALL PLANS & EXISTING DIMENSIONS & CONDITIONS ON THE JOB SITE & SHALL IMMEDIATELY NOTIFY THE ENGINEER IN WRITING OF ANY DISCREPANCIES BEFORE PROCEEDING WITH THE WORK OR BE RESPONSIBLE FOR SAME.

FULL SIZE = 24"x36". ANY OTHER SIZE PRINT IS NOT ORIGINAL SCALE.

ALL INDICATED DIMENSIONS SHALL TAKE PRECEDENT OVER SCALED DIMENSIONS.

UNDERGROUND SERVICE ALERT
UTILITY NOTIFICATION CENTER OF CALIFORNIA
(800) 422-4133
WWW.CALIFORNIA811.ORG

CALL 2-14 WORKING DAYS UTILITY NOTIFICATION PRIOR TO CONSTRUCTION

SITE INFORMATION

PROPERTY OWNER:	WEISS FAMILY PROPERTIES, LLC		
ADDRESS:	DULCE AGUIRRE 15551 CABRITO RD. VAN NUYS, CA 91406		
COUNTY:	LOS ANGELES	ROOFTOP CO SITE ID:	--
ZONING JURISDICTION:	LOS ANGELES	TOWER APP NUMBER:	--
ZONING DISTRICT:	CITY OF LOS ANGELES	LATITUDE (NAD 83):	34° 11' 13.28" N 34.187024°
PARCEL NUMBER:	2329-005-018	LONGITUDE (NAD 83):	118° 25' 41.94" W -118.428316°
OCCUPANCY GROUP:	U		
CONSTRUCTION TYPE:	V-B		
POWER COMPANY:	LADWP		
TELEPHONE COMPANY:	AT&T/CROWN CASTLE		
EQUIPMENT LEASE AREA:	124 SQ. FT.		
ANTENNA LEASE AREA:	680 SQ. FT.		
TOTAL LEASE AREA:	804 SQ. FT.		

PROJECT TEAM

PROJECT MANAGER:
AT&T
1452 EDINGER AVE, 3RD FLOOR
TUSTIN, CA 92780
CONTACT: TY LOGAN-BURKS
PHONE: (925) 549-4671
EMAIL: tl784a@att.com

SITE ACQUISITION:
EUKON GROUP
65 POST, SUITE 1000
IRVINE, CA 92618
CONTACT: JON SILVA
PHONE: (714) 393-7963
EMAIL: jon.silvia@eukongroup.com

A&E CONTACT:
EUKON GROUP
65 POST, SUITE 1000
IRVINE, CA 92618
CONTACT: RICH BRUNET
PHONE: (949) 899-5597
EMAIL: rich.brunet@eukongroup.com

RF ENGINEER:
AT&T
1452 EDINGER AVE, 3RD FLOOR
TUSTIN, CA 92780
CONTACT: ZAHID GHANI
PHONE: (951) 314-9435
EMAIL: mg7017@att.com

ZONING:
EUKON GROUP
65 POST, SUITE 1000
IRVINE, CA 92618
CONTACT: BARDO OSORIO
PHONE: (949) 702-0566
EMAIL: bardo.osorio@eukongroup.com

CONSTRUCTION:
JACOBS
2600 MICHELSON DRIVE #500
IRVINE, CA 92612
CONTACT: SAMUEL GOUVEIA
PHONE: (760) 481-2424
EMAIL: samuel.gouveia@jacobs.com

VICINITY MAP

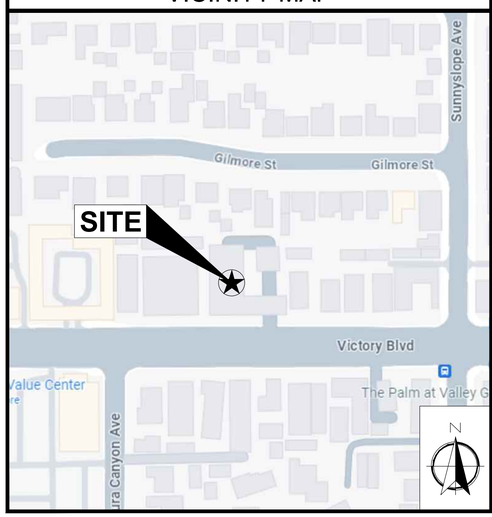

AERIAL VIEW

DRIVING DIRECTIONS

DIRECTIONS FROM AT&T OFFICE AT 1452 EDINGER AVE, TUSTIN, CA 92780

1. DEPART 1452 EDINGER AVE AND HEAD NORTH ON EDINGER AVE. TOWARDS I-5 SOUTH.
2. HEAD SOUTHEAST ON INDUSTRIAL DR. GO FOR 449 FT.
3. THEN 0.09 MILES
4. TURN LEFT ONTO RED HILL AVE. GO FOR 0.1 MI.
5. THEN 0.1 MILES
6. TURN LEFT ONTO EDINGER AVE. GO FOR 0.5 MI.
7. THEN 0.5 MILES
8. TURN LEFT ONTO NEWPORT AVE. GO FOR 0.3 MI.
9. THEN 0.3 MILES
10. TURN RIGHT AND TAKE RAMP ONTO CA-55 N (COSTA MESA FWY). GO FOR 0.9 MI.
11. THEN 0.9 MILES
12. TAKE EXIT 10B TOWARD SANTA ANA ONTO I-5 N (SANTA ANA FWY). GO FOR 32.6 MI.
13. THEN 32.6 MILES
14. CONTINUE ON I-5 N (GOLDEN STATE FWY) TOWARD SACRAMENTO. GO FOR 8.4 MI.
15. THEN 8.4 MILES
16. TAKE THE EXIT TOWARD CA-134/VENTURA FWY/VENTURA ONTO CA-134 W (VENTURA FWY). GO FOR 5.2 MI.
17. THEN 5.2 MILES
18. TAKE THE EXIT TOWARD HOLLYWOOD FWY NORTH ONTO CA-170 N (HOLLYWOOD FWY). GO FOR 2.7 MI.
19. THEN 2.7 MILES
20. TAKE EXIT 8B TOWARD VICTORY BL/VICTORY BLVD WEST ONTO VICTORY BLVD. GO FOR 2.1 MI.
21. THEN 2.1 MILES
22. 13535 VICTORY BLVD VAN NUYS, CA 91401-1702

APPROVALS

THE FOLLOWING PARTIES HEREBY APPROVE AND ACCEPT THESE DOCUMENTS & AUTHORIZE THE SUBCONTRACTOR TO PROCEED WITH THE ZONING DESCRIBED HEREIN. ALL DOCUMENTS ARE SUBJECT TO REVIEW BY THE LOCAL BUILDING DEPARTMENT & MAY IMPOSE CHANGES OR MODIFICATIONS.

APPROVED BY:	DATE:
AT&T RF ENGINEER:	
AT&T OPERATIONS:	
SAQ MANAGER:	
PROJECT MANAGER:	
ZONING VENDOR:	
LEASING VENDOR:	
ZONING MANAGER:	
PROPERTY OWNER:	

PROJECT DESCRIPTION

AT&T WIRELESS PROPOSES TO INSTALL A WIRELESS COMMUNICATIONS FACILITY. THE SCOPE WILL CONSIST OF THE FOLLOWING:

- (3) PROPOSED FRP SCREEN ENCLOSURES ON EXISTING ROOFTOP
- (12) PROPOSED AT&T PANEL ANTENNAS
- (36) PROPOSED AT&T RRUS
- (6) PROPOSED AT&T DC9 SURGE SUPPRESSORS
- (1) PROPOSED AT&T DC50 SURGE SUPPRESSORS
- (2) PROPOSED AT&T GPS ANTENNAS AT GRADE
- (1) PROPOSED CHAIN LINK ENCLOSURE W/ SLIDING GATE AT GRADE
- (1) PROPOSED AT&T POWER PLANT AT GRADE
- (1) PROPOSED AT&T BATTERY CABINET AT GRADE
- (1) PROPOSED AT&T 20KW 54GAL DIESEL BACK-UP GENERATOR AT GRADE
- (2) PROPOSED AT&T UTILITY TRENCHES
- (1) PROPOSED AT&T CIENA PANEL AT GRADE
- (1) PROPOSED AT&T TELCO BOX AT GRADE
- (1) PROPOSED AT&T ELECTRICAL PANEL AT GRADE

SHEET INDEX

SHEET	DESCRIPTION	REV
T-1	TITLE SHEET	0
LS-1	SITE SURVEY	0
A-1	SITE PLAN	0
A-1.1	ROOF PLAN	0
A-2	EQUIPMENT PLAN	0
A-3	ANTENNA PLANS	0
A-3.1	ANTENNA AND RRU SCHEDULE	0
A-4	ELEVATIONS	0
A-4.1	ELEVATIONS	0

at&t
1452 EDINGER AVE.
3RD FLOOR
TUSTIN, CA 92780

Eukon
an SFC Communications, Inc. Company
65 POST, SUITE 1000
IRVINE, CA 92618
TEL: (949) 553-8566
www.eukongroup.com

NOT FOR CONSTRUCTION

IT IS A VIOLATION OF LAW FOR ANY PERSON, UNLESS THEY ARE ACTING UNDER THE DIRECTION OF THE LICENSED PROFESSIONAL ENGINEER, TO ALTER THIS DOCUMENT.

DRAWN BY:	UTILITIES CHECKED BY:	A&E CHECKED BY:
MG	GD	IB

ZONING DRAWINGS

SUBMITTALS

REV	DATE	DESCRIPTION
A	09/03/24	90% ZONING DRAWINGS
0	10/09/24	100% ZONING DRAWINGS

PROJECT INFORMATION

CL00010

13535 VICTORY BLVD.
VAN NUYS, CA 91401

SHEET TITLE

TITLE SHEET

SHEET NUMBER

T-1



Line Table		
Line #	Length	Direction
L1	15.50	N90°00'00"E
L2	8.00	S0°00'00"E
L3	15.50	N90°00'00"W
L4	8.00	N0°00'00"E

POSITION OF GEODETIC COORDINATES – BLDG. CENTER
LATITUDE 34° 11' 13.28" (34.187024°) NORTH (NAD83)
LONGITUDE 118° 25' 41.94" (118.428316°) WEST (NAD83)
GROUND ELEVATION @ SW BLDG CORNER 709.9' (NAVD88)

POSITION OF GEODETIC COORDINATES – SECTOR "B"
LATITUDE 34° 11' 12.80" (34.186889°) NORTH (NAD83)
LONGITUDE 118° 25' 42.42" (118.428450°) WEST (NAD83)
GROUND ELEVATION @ SW BLDG CORNER 709.9' (NAVD88)

POSITION OF GEODETIC COORDINATES – SECTOR "A"
LATITUDE 34° 11' 12.83" (34.186897°) NORTH (NAD83)
LONGITUDE 118° 25' 42.02" (118.428339°) WEST (NAD83)
GROUND ELEVATION @ SW BLDG CORNER 709.9' (NAVD88)

POSITION OF GEODETIC COORDINATES – SECTOR "C"
LATITUDE 34° 11' 13.96" (34.187211°) NORTH (NAD83)
LONGITUDE 118° 25' 42.16" (118.428379°) WEST (NAD83)
GROUND ELEVATION @ SW BLDG CORNER 709.9' (NAVD88)

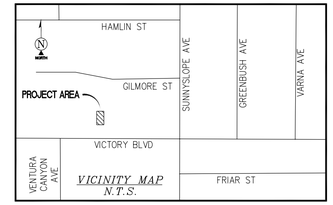

SURVEY DATE
05/23/2024

BASIS OF BEARING
BEARINGS SHOWN HEREON ARE BASED UPON THE CALIFORNIA ZONE FIVE STATE PLANE COORDINATE SYSTEM BASED ON THE NORTH AMERICAN DATUM OF 1983(2011) (EPOCH 2019.25). DETERMINED BY GLOBAL POSITIONING SYSTEM EQUIPMENT ON THE SMARTNET REFERENCE NETWORK.

BENCHMARK
PROJECT ELEVATIONS ESTABLISHED FROM GPS DERIVED ORTHOMETRIC HEIGHTS BY APPLICATION OF NGS 'GEOID 18' MODELED SEPARATIONS TO ELLIPSOID HEIGHTS DETERMINED BY OBSERVATIONS OF THE 'SMARTNET' REAL TIME NETWORK. ALL ELEVATIONS SHOWN HEREON ARE REFERENCED TO NAVD88.

GRID-TO-GROUND SCALE FACTOR NOTE
ALL BEARINGS AND DISTANCES ARE BASED ON THE CALIFORNIA STATE ZONE FIVE STATE PLANE COORDINATE ZONE GRID. TO DERIVE GROUND DISTANCES DIVIDE BY 0.9997025

FLOOD ZONE
THIS PROJECT APPEARS TO BE LOCATED WITHIN FLOOD ZONE "X". ACCORDING TO FEDERAL EMERGENCY MANAGEMENT AGENCY FLOOD INSURANCE RATE MAP(S), MAP ID #06037C1320F, DATED 09/26/2008

UTILITY NOTES
SURVEYOR DOES NOT GUARANTEE THAT ALL UTILITIES ARE SHOWN OR THEIR LOCATIONS ARE DEFINITE. IT IS THE RESPONSIBILITY OF THE CONTRACTOR AND DEVELOPER TO CONTACT 811 AND ANY OTHER INVOLVED AGENCIES TO LOCATE ALL UTILITIES PRIOR TO CONSTRUCTION. REMOVAL, RELOCATION AND/ OR REPLACEMENT IS THE RESPONSIBILITY OF THE CONTRACTOR.

SURVEYOR'S NOTES
CONTOURS DERIVED FROM DIRECT FIELD OBSERVATIONS AND FOLLOW THE CURRENT NATIONAL MAP STANDARDS FOR VERTICAL ACCURACY.

THE BOUNDARY LINES SHOWN HEREON ARE BASED ON MAPS OF RECORD AND DEED INFORMATION AS PROVIDED BY A TITLE REPORT AND A SEARCH OF THE COUNTY RECORDER AND SURVEYOR ONLINE DATABASE. A FIELD SURVEY HAS BEEN PERFORMED AND MONUMENTATION HAS BEEN RECOVERED TO PLACE THE RECORD INFORMATION. RECORD BEARINGS HAVE BEEN ADJUSTED TO THE BASIS OF BEARING STATEMENT SHOWN ON THIS SURVEY. THIS SURVEY DOES NOT MAKE ANY ATTEMPT TO RECONCILE ANY ERRORS IN THE RECORD MAPS OR DEEDS OF RECORD.

ALL DISTANCES SHOWN HEREON ARE GRID DISTANCES.

SURVEYOR HAS NOT PERFORMED A SEARCH OF PUBLIC RECORDS TO DETERMINE ANY DEFECT IN TITLE ISSUED.

LEGEND

AP	ASPHALT
BLDG	TOP OF BUILDING
CONC	CONCRETE
D/W	DRIVEWAY
FC	FACE OF CURB
NG	NATURAL GRADE
PIPE	STEEL PIPES
PP	POWER POLE
SW	SIDEWALK
TOP	TOP SOLAR PANELS
VP	VERTICAL PIPE
◉	AS NOTED

- UTILITY METER
- DISH ANTENNA
- UTILITY POLE
- POSITION OF GEODETIC COORDINATES
- SPOT ELEVATION
- WATER CONTROL VALVE
- TREES
- PINE TREES
- CMU WALLS
- WROUGHT IRON FENCE
- CURBLINES
- EXISTING BUILDINGS
- STREET CENTERLINES
- SUBJECT PROPERTY LINE
- ADJACENT PROPERTY LINE
- MAJOR CONTOUR INTERVAL
- MINOR CONTOUR INTERVAL

N 11° 32' E

GRAPHIC SCALE

15 0 7.5 15 30 60

(IN FEET)
1 inch = 15 ft.

LICENSED LAND SURVEYOR
MATTHEW R. FORD
No. 9588
STATE OF CALIFORNIA
DATE: 09/11/2024

APPLICANT:

The new at&t
1452 EDINGER AVENUE
3RD FLOOR
TUSTIN, CA 92780

ENGINEER:

Eukon
an SFC Communications, Inc. Company
65 POST, SUITE 1000
IRVINE, CA 92618
TEL: (949) 553-8566
www.eukongroup.com

DRAWN BY:	RR
CHECKED BY:	NS (A)

REVISIONS:

REV	DATE	DESCRIPTION
0	09/06/24	TITLE & DESIGN (C) (AC)
A	06/03/24	PRELIMINARY (RR)

ambit consulting
428 MAIN STREET
SUITE 206
HUNTINGTON BEACH, CA 92648
PH. (480) 659-4072
www.ambitconsulting.us

PROJECT INFORMATION:

CLL00010

13535 VICTORY BOULEVARD
VAN NUYS, CA 91401

LOS ANGELES COUNTY

SHEET TITLE:

SITE SURVEY

SHEET NUMBER:

LS-1

LESSOR'S LEGAL DESCRIPTION (PER TITLE)

THE LAND REFERRED TO HEREIN BELOW IS SITUATED IN THE COUNTY OF LOS ANGELES, STATE OF CALIFORNIA AND IS DESCRIBED AS FOLLOWS:

THE SOUTHERLY 190 FEET OF THAT PORTION OF LOT 19 OF TRACT NO. 1000, IN THE CITY OF LOS ANGELES, COUNTY OF LOS ANGELES, STATE OF CALIFORNIA, AS PER MAP RECORDED IN BOOK 19, PAGES 1 TO 34 INCLUSIVE OF MAPS, IN THE OFFICE OF THE COUNTY RECORDER OF SAID COUNTY, DESCRIBED AS FOLLOWS:

BEGINNING AT A POINT IN THE SOUTHERLY LINE OF SAID LOT 19, DISTANT THEREON WESTERLY 328.98 FEET FROM THE SOUTHEASTERLY CORNER OF SAID LOT, SAID POINT BEING THE SOUTHWESTERLY CORNER OF THE LAND CONVEYED TO JOHN R. HOOK AND LAURA S. HOOK BY DEED RECORDED IN BOOK 404, PAGE 163 OF OFFICIAL RECORDS; THENCE WESTERLY ALONG THE SOUTHERLY LINE OF SAID LOT 19, 161.5 FEET; THENCE NORTHERLY PARALLEL WITH THE WESTERLY LINE OF THE LAND OF SAID HOOK, 649.55 FEET; THENCE EASTERLY PARALLEL WITH THE SOUTHERLY LINE OF SAID LOT 19, 161.5 FEET TO A POINT IN

SCHEDULE "B" NOTE

REFERENCE IS MADE TO THE TITLE REPORT ORDER #932400070, ISSUED BY COMMONWEALTH LAND TITLE INSURANCE COMPANY, DATED MAY 13, 2024. ALL EASEMENTS CONTAINED WITHIN SAID TITLE REPORT AFFECTING THE IMMEDIATE AREA SURROUNDING THE LEASE HAVE BEEN PLOTTED.

ITEMIZED NOTES:

1. PROPERTY TAXES, WHICH ARE A LIEN NOT YET DUE AND PAYABLE, INCLUDING ANY ASSESSMENTS COLLECTED WITH TAXES TO BE LEVIED FOR THE FISCAL YEAR 2024–2025. (THE EXCEPTION IS A STANDARD EXCEPTION AND NOT THE TYPE TO BE DEPICTED HEREON)

2. PROPERTY TAXES, INCLUDING ANY PERSONAL PROPERTY TAXES AND ANY ASSESSMENTS COLLECTED WITH TAXES, ARE PAID. FOR PRORATION PURPOSES THE AMOUNTS WERE:
   TAX IDENTIFICATION NO.: 2329–005–018
   FISCAL YEAR: 2023–2024
   1ST INSTALLMENT: $29,916.99
   2ND INSTALLMENT $29,916.99
   EXEMPTION: $0.00
   CODE AREA: 00013
   (THE EXCEPTION IS A STANDARD EXCEPTION AND NOT THE TYPE TO BE DEPICTED HEREON)

3. THE HEREIN DESCRIBED PROPERTY LIES WITHIN THE BOUNDARIES OF A MELLO–ROOS COMMUNITY FACILITIES DISTRICT (CFD) AS FOLLOWS:
   CFD NO.: 1
   FOR: MOUNTAINS RECREATION AND CONSERVATION AUTHORITY COMMUNITY FACILITIES DISTRICT NO. 1
   DISCLOSED BY: NOTICE OF SPECIAL TAX LIEN
   RECORDING DATE: JANUARY 23, 2013
   RECORDING NO.: 2013–110802 OF OFFICIAL RECORDS
   THIS PROPERTY, ALONG WITH ALL OTHER PARCELS IN THE CFD, IS LIABLE FOR AN ANNUAL SPECIAL TAX. THIS SPECIAL TAX IS INCLUDED WITH AND PAYABLE WITH THE GENERAL PROPERTY TAXES OF THE CITY OF "LOS ANGELES", COUNTY OF "LOS ANGELES".
   THE TAX MAY NOT BE PREPAID.
   THE DOCUMENT ENTITLED "AMENDED NOTICE OF SPECIAL TAX LIEN"
   RECORDING DATE: AUGUST 2, 2013
   RECORDING NO.: 2013–1141558 OF OFFICIAL RECORDS
   (BLANKET IN NATURE)

4. ANY LIENS OR OTHER ASSESSMENTS, BONDS, OR SPECIAL DISTRICT LIENS INCLUDING WITHOUT LIMITATION, COMMUNITY FACILITY DISTRICTS, THAT ARISE BY REASON OF ANY LOCAL, CITY, MUNICIPAL OR COUNTY PROJECT OR SPECIAL DISTRICT. (THE EXCEPTION IS A STANDARD EXCEPTION AND NOT THE TYPE TO BE DEPICTED HEREON)

5. THE LIEN OF SUPPLEMENTAL OR ESCAPED ASSESSMENTS OF PROPERTY TAXES, IF ANY, MADE PURSUANT TO THE PROVISIONS OF CHAPTER 3.5 (COMMENCING WITH SECTION 75) OR PART 2, CHAPTER 3, ARTICLES 3 AND 4, RESPECTIVELY, OF THE REVENUE AND TAXATION CODE OF THE STATE OF CALIFORNIA AS A RESULT OF THE TRANSFER OF TITLE TO THE VESTEE NAMED IN SCHEDULE A OR AS A RESULT OF CHANGES IN OWNERSHIP OR NEW CONSTRUCTION OCCURRING PRIOR TO DATE OF POLICY.
   (THE EXCEPTION IS A STANDARD EXCEPTION AND NOT THE TYPE TO BE DEPICTED HEREON)

6. WATER RIGHTS, CLAIMS OR TITLE TO WATER, WHETHER OR NOT DISCLOSED BY THE PUBLIC RECORDS.
   (THE EXCEPTION IS A STANDARD EXCEPTION AND NOT THE TYPE TO BE DEPICTED HEREON)

7. COVENANTS, CONDITIONS AND RESTRICTIONS BUT OMITTING ANY COVENANTS OR RESTRICTIONS, IF ANY, INCLUDING BUT NOT LIMITED TO THOSE BASED UPON AGE, RACE, COLOR, RELIGION, SEX, GENDER, GENDER IDENTITY, GENDER EXPRESSION, SEXUAL ORIENTATION, MARITAL STATUS, NATIONAL ORIGIN, ANCESTRY, FAMILIAL STATUS, SOURCE OF INCOME, DISABILITY, VETERAN OR MILITARY STATUS, GENETIC INFORMATION, MEDICAL CONDITION, CITIZENSHIP, PRIMARY LANGUAGE, AND IMMIGRATION STATUS, AS SET FORTH IN APPLICABLE STATE OR FEDERAL LAWS, EXCEPT TO THE EXTENT THAT SAID COVENANT OR RESTRICTION IS PERMITTED BY APPLICABLE LAW, AS SET FORTH IN THE DOCUMENT
   RECORDING NO.: BOOK 6170, PAGE 276 OF OFFICIAL RECORDS (BLANKET IN NATURE)

8. AN EASEMENT FOR UTILITY AND INCIDENTAL PURPOSES OVER A PORTION OF SAID LAND AS SET FORTH IN THE DOCUMENT ABOVE MENTIONED.
   (UNDERLYING DOCUMENT NOT PROVIDED – NOT SHOWN)

9. EASEMENT(S) FOR THE PURPOSE(S) SHOWN BELOW AND RIGHTS INCIDENTAL THERETO AS SET FORTH IN A DOCUMENT:
   PURPOSE: UTILITIES
   RECORDING NO: BOOK 23118, PAGE 18 OF OFFICIAL RECORDS
   AFFECTS: A PORTION OF SAID LAND
   (AS SHOWN ON SURVEY)

10. EASEMENT(S) FOR THE PURPOSE(S) SHOWN BELOW AND RIGHTS INCIDENTAL THERETO AS SET FORTH IN A DOCUMENT:
    PURPOSE: UTILITIES
    RECORDING NO: BOOK 23518, PAGE 76 OF OFFICIAL RECORDS
    AFFECTS: A PORTION OF SAID LAND
    (AS SHOWN ON SURVEY)

11. EASEMENT(S) FOR THE PURPOSE(S) SHOWN BELOW AND RIGHTS INCIDENTAL THERETO AS SET FORTH IN A DOCUMENT:
    PURPOSE: PUBLIC STREET, ROAD OR HIGHWAY PURPOSES
    RECORDING NO: BOOK 40056, PAGE 179 OF OFFICIAL RECORDS
    AFFECTS: A PORTION OF SAID LAND
    (AS SHOWN ON SURVEY)

SCHEDULE "B" NOTE (CONTINUED)

12. THE LAND DESCRIBED HEREIN IS INCLUDED WITHIN A PROJECT AREA OF THE REDEVELOPMENT AGENCY SHOWN BELOW, AND THAT PROCEEDINGS FOR THE REDEVELOPMENT OF SAID PROJECT HAVE BEEN INSTITUTED UNDER THE REDEVELOPMENT LAW (SUCH REDEVELOPMENT TO PROCEED ONLY AFTER THE ADOPTION OF THE REDEVELOPMENT PLAN) AS DISCLOSED BY A DOCUMENT.
    REDEVELOPMENT AGENCY: COMMUNITY REDEVELOPMENT AGENCY OF THE CITY OF LOS ANGELES
    RECORDING DATE: DECEMBER 28, 1994
    RECORDING NO.: 94–2276777 OF OFFICIAL RECORDS
    (THE ORIGIN OF THE EASEMENT ORIGINATES OUTSIDE OF THE SCOPE OF THIS SURVEY. CANNOT DETERMINE AFFECT)

13. THE LAND DESCRIBED HEREIN IS INCLUDED WITHIN A PROJECT AREA OF THE REDEVELOPMENT AGENCY SHOWN BELOW, AND THAT PROCEEDINGS FOR THE REDEVELOPMENT OF SAID PROJECT HAVE BEEN INSTITUTED UNDER THE REDEVELOPMENT LAW (SUCH REDEVELOPMENT TO PROCEED ONLY AFTER THE ADOPTION OF THE REDEVELOPMENT PLAN) AS DISCLOSED BY A DOCUMENT.
    REDEVELOPMENT AGENCY: COMMUNITY REDEVELOPMENT AGENCY OF THE CITY OF LOS ANGELES
    RECORDING DATE: NOVEMBER 30, 2007
    RECORDING NO.: 2007–2636424 OF OFFICIAL RECORDS
    (THE ORIGIN OF THE EASEMENT ORIGINATES OUTSIDE OF THE SCOPE OF THIS SURVEY. CANNOT DETERMINE AFFECT)

14. A NOTICE OF SUBSTANDARD PROPERTY AS DISCLOSED BY A DOCUMENT
    RECORDING DATE: JUNE 10, 2016
    RECORDING NO.: 2016–671904 OF OFFICIAL RECORDS
    REFERENCE IS HEREBY MADE TO SAID DOCUMENT FOR FULL PARTICULARS. (BLANKET IN NATURE)

15. A DEED OF TRUST TO SECURE AN INDEBTEDNESS IN THE AMOUNT SHOWN BELOW,
    AMOUNT: $905,000.00
    DATED: OCTOBER 11, 2016
    TRUSTOR: WEISS INVESTMENT PROPERTIES, LP, A DELAWARE LIMITED PARTNERSHIP
    TRUSTEE: JP MORGAN CHASE BANK, N.A.
    BENEFICIARY: JP MORGAN CHASE BANK, N.A.
    LOAN NO.: 100015595
    RECORDING DATE: NOVEMBER 1, 2016
    RECORDING NO.: 2016–1348280 OF OFFICIAL RECORDS
    (BLANKET IN NATURE)

16. ANY RIGHTS OF THE PARTIES IN POSSESSION OF A PORTION OF, OR ALL OF, SAID LAND, WHICH RIGHTS ARE NOT DISCLOSED BY THE PUBLIC RECORDS.
    THE COMPANY WILL REQUIRE, FOR REVIEW, A FULL AND COMPLETE COPY OF ANY UNRECORDED AGREEMENT, CONTRACT, LICENSE AND/OR LEASE, TOGETHER WITH ALL SUPPLEMENTS, ASSIGNMENTS AND AMENDMENTS THERETO, BEFORE ISSUING ANY POLICY OF TITLE INSURANCE WITHOUT EXCEPTING THIS ITEM FROM COVERAGE.
    THE COMPANY RESERVES THE RIGHT TO EXCEPT ADDITIONAL ITEMS AND/OR MAKE ADDITIONAL REQUIREMENTS AFTER REVIEWING SAID DOCUMENTS.
    (THE EXCEPTION IS A STANDARD EXCEPTION AND NOT THE TYPE TO BE DEPICTED HERON)

LEASE AREA LEGAL DESCRIPTION

A PORTION OF THE SOUTHERLY 190 FEET OF THAT PORTION OF LOT 19 OF TRACT NO. 1000, IN THE CITY OF LOS ANGELES, COUNTY OF LOS ANGELES, STATE OF CALIFORNIA, AS PER MAP RECORDED IN BOOK 19, PAGES 1 TO 34 INCLUSIVE OF MAPS, IN THE OFFICE OF THE COUNTY RECORDER OF SAID COUNTY, BEING MORE PARTICULARLY DESCRIBED AS FOLLOWS:

COMMENCING AT A HEX BOLT IN A HAND HOLE MARKING THE CENTERLINE INTERSECTION OF VICTORY BOULEVARD AND WOODMAN AVENUE, FROM WHICH A HEX BOLT IN A HAND HOLE MARKING THE CENTERLINE INTERSECTION OF WOODMAN AVENUE AND KITTRIDGE STREET BEARS NORTH 00°13'09" EAST ALONG THE CENTERLINE OF WOODMAN AVENUE, 1324.44 FEET; THENCE FROM SAID POINT OF COMMENCEMENT NORTH 00°13'09" EAST ALONG THE CENTERLINE OF WOODMAN AVENUE 204.52 FEET; THENCE DEPARTING SAID CENTERLINE NORTH 90°00'00" EAST, 837.59 FEET TO THE POINT OF BEGINNING:

THENCE NORTH 90°00'00" EAST, 15.50 FEET;
THENCE SOUTH 00°00'00" EAST, 8.00 FEET;
THENCE NORTH 90°00'00" WEST, 15.50 FEET;
THENCE NORTH 00°00'00" EAST, 8.00 FEET TO THE POINT OF BEGINNING.

CONTAINING 120 SQUARE FEET (0.0027 ACRES) OF LAND, MORE OR LESS.

LICENSED LAND SURVEYOR
MATTHEW R. FORD
No. 9588
STATE OF CALIFORNIA
DATE: 09/11/2024

APPLICANT:

The new at&t
1452 EDINGER AVENUE
3RD FLOOR
TUSTIN, CA 92780

ENGINEER:

Eukon
an SFC Communications, Inc. Company
65 POST, SUITE 1000
IRVINE, CA 92618
TEL: (949) 553-8566
www.eukongroup.com

DRAWN BY:	RR
CHECKED BY:	NS (A)

REVISIONS:

REV	DATE	DESCRIPTION
0	09/06/24	TITLE & DESIGN (C) (AC)
A	06/03/24	PRELIMINARY (RR)

ambit consulting
428 MAIN STREET
SUITE 206
HUNTINGTON BEACH, CA 92648
PH. (480) 659-4072
www.ambitconsulting.us

PROJECT INFORMATION:

CLL00010

13535 VICTORY BOULEVARD
VAN NUYS, CA 91401

LOS ANGELES COUNTY

SHEET TITLE:

NOTES

SHEET NUMBER:

LS-2

NOTES:

1. IF DIMENSIONS SHOWN ON PLAN DO NOT SCALE CORRECTLY, CHECK FOR REDUCTION OR ENLARGEMENT FROM ORIGINAL PLANS.
2. CONTRACTOR SHALL FIELD VERIFY ALL DIMENSIONS.
3. UTILITY DESIGNS AND ROUTES ARE PRELIMINARY PENDING FINAL DESIGN BY UTILITY PROVIDER.
4. THIS SITE PLAN IS NOT INTENDED TO BE A LAND SURVEY.

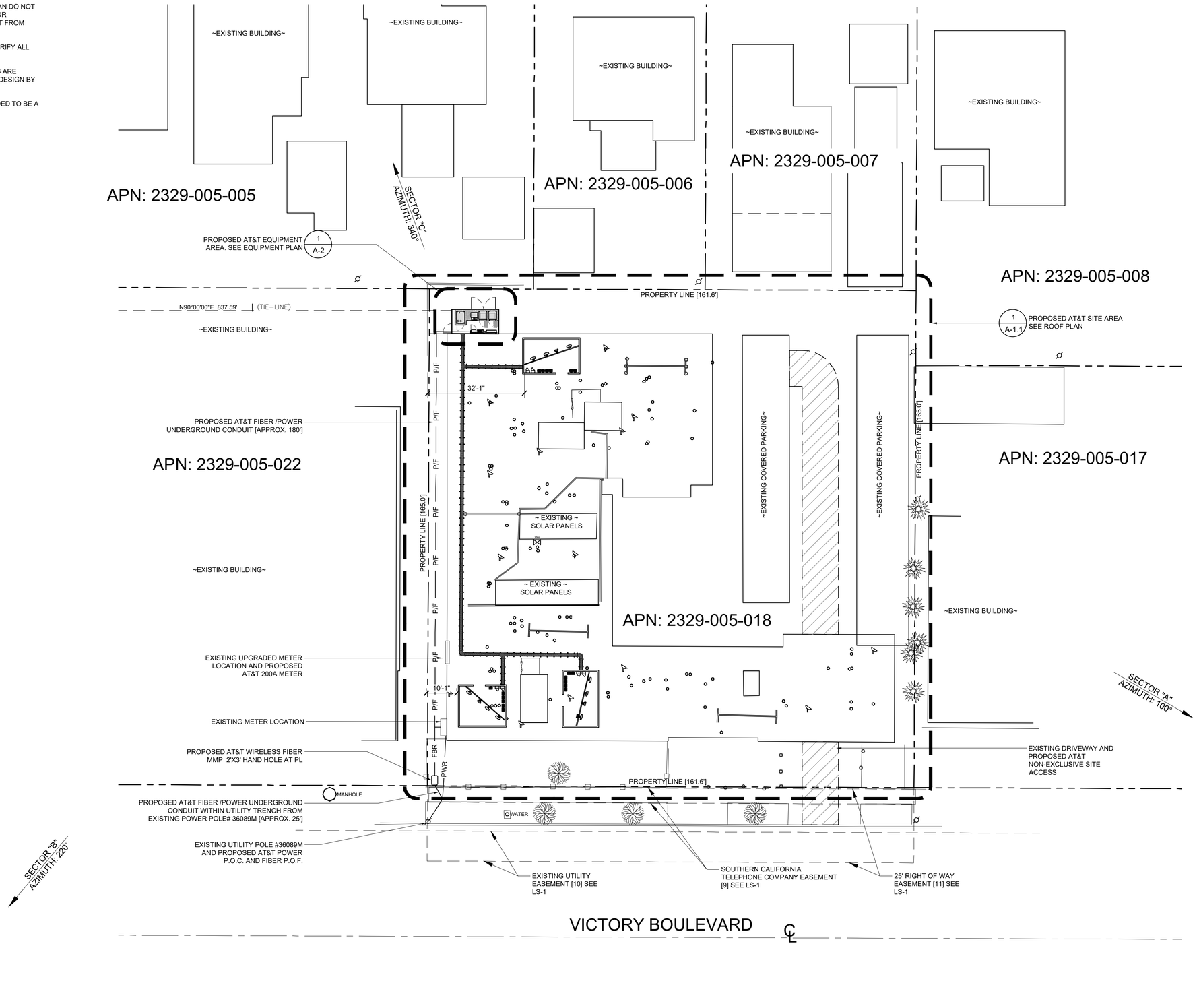

SITE PLAN

SCALE 1/16"=1'-0" 16' 0 8' 16' 32' 64'

1

EUKON_AT&T_90CD_ROOFTOP TEMPLATE_V1_11-18-22

at&t

1452 EDINGER AVE.
3RD FLOOR
TUSTIN, CA 92780

Eukon
an SFC Communications, Inc. Company
65 POST, SUITE 1000
IRVINE, CA 92618
TEL: (949) 553-8566
www.eukongroup.com

NOT FOR CONSTRUCTION

IT IS A VIOLATION OF LAW FOR ANY PERSON, UNLESS THEY ARE ACTING UNDER THE DIRECTION OF THE LICENSED PROFESSIONAL ENGINEER, TO ALTER THIS DOCUMENT.

DRAWN BY:	UTILITIES CHECKED BY:	A&E CHECKED BY:
MG	GD	IB

ZONING DRAWINGS

SUBMITTALS

REV	DATE	DESCRIPTION
A	09/03/24	90% ZONING DRAWINGS
0	10/09/24	100% ZONING DRAWINGS

PROJECT INFORMATION

CL00010

13535 VICTORY BLVD.
VAN NUYS, CA 91401

SHEET TITLE

SITE PLAN

SHEET NUMBER

A-1

NOTES:

1. IF DIMENSIONS SHOWN ON PLAN DO NOT SCALE CORRECTLY, CHECK FOR REDUCTION OR ENLARGEMENT FROM ORIGINAL PLANS.
2. CONTRACTOR SHALL FIELD VERIFY ALL DIMENSIONS.
3. THIS SITE PLAN IS NOT INTENDED TO BE A LAND SURVEY.

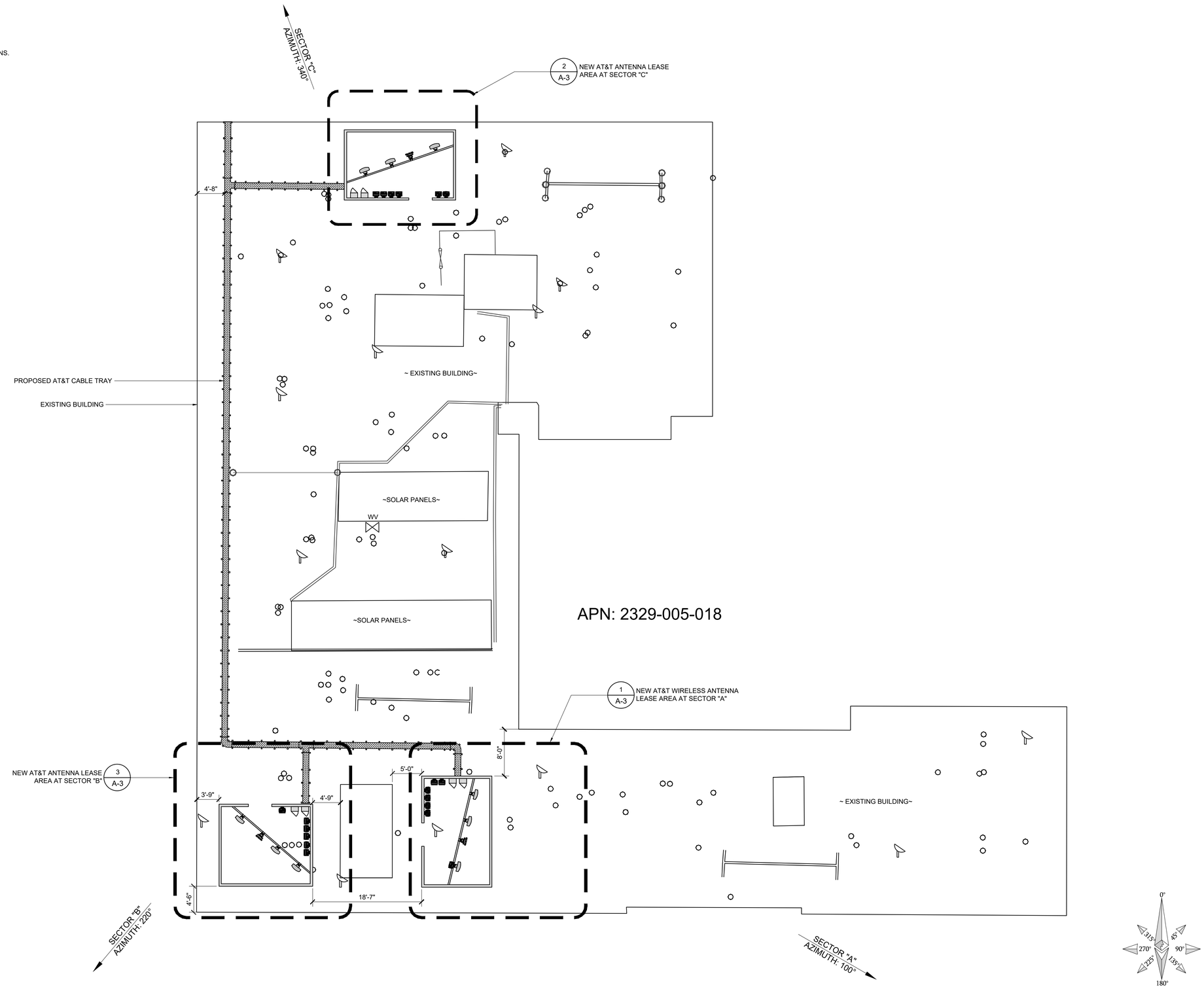

ROOF PLAN

SCALE	
1/8"=1'-0"	8' 0 4' 8' 16' 32'

1

EUKON_AT&T_90CD_ROOFTOP TEMPLATE_V1_11-18-22

at&t

1452 EDINGER AVE.
3RD FLOOR
TUSTIN, CA 92780

Eukon
an SFC Communications, Inc. Company
65 POST, SUITE 1000
IRVINE, CA 92618
TEL: (949) 553-8566
www.eukongroup.com

NOT FOR CONSTRUCTION

IT IS A VIOLATION OF LAW FOR ANY PERSON, UNLESS THEY ARE ACTING UNDER THE DIRECTION OF THE LICENSED PROFESSIONAL ENGINEER, TO ALTER THIS DOCUMENT.

DRAWN BY:	UTILITIES CHECKED BY:	A&E CHECKED BY:
MG	GD	IB

ZONING DRAWINGS

SUBMITTALS

REV	DATE	DESCRIPTION
A	09/03/24	90% ZONING DRAWINGS
0	10/09/24	100% ZONING DRAWINGS

PROJECT INFORMATION

CL00010

13535 VICTORY BLVD.
VAN NUYS, CA 91401

SHEET TITLE

ROOF PLAN

SHEET NUMBER

A-1.1

NOTE:

1. IF DIMENSIONS SHOWN ON PLAN DO NOT SCALE CORRECTLY, CHECK FOR REDUCTION OR ENLARGEMENT FROM ORIGINAL PLANS.
2. CONTRACTOR SHALL FIELD VERIFY ALL DIMENSIONS.

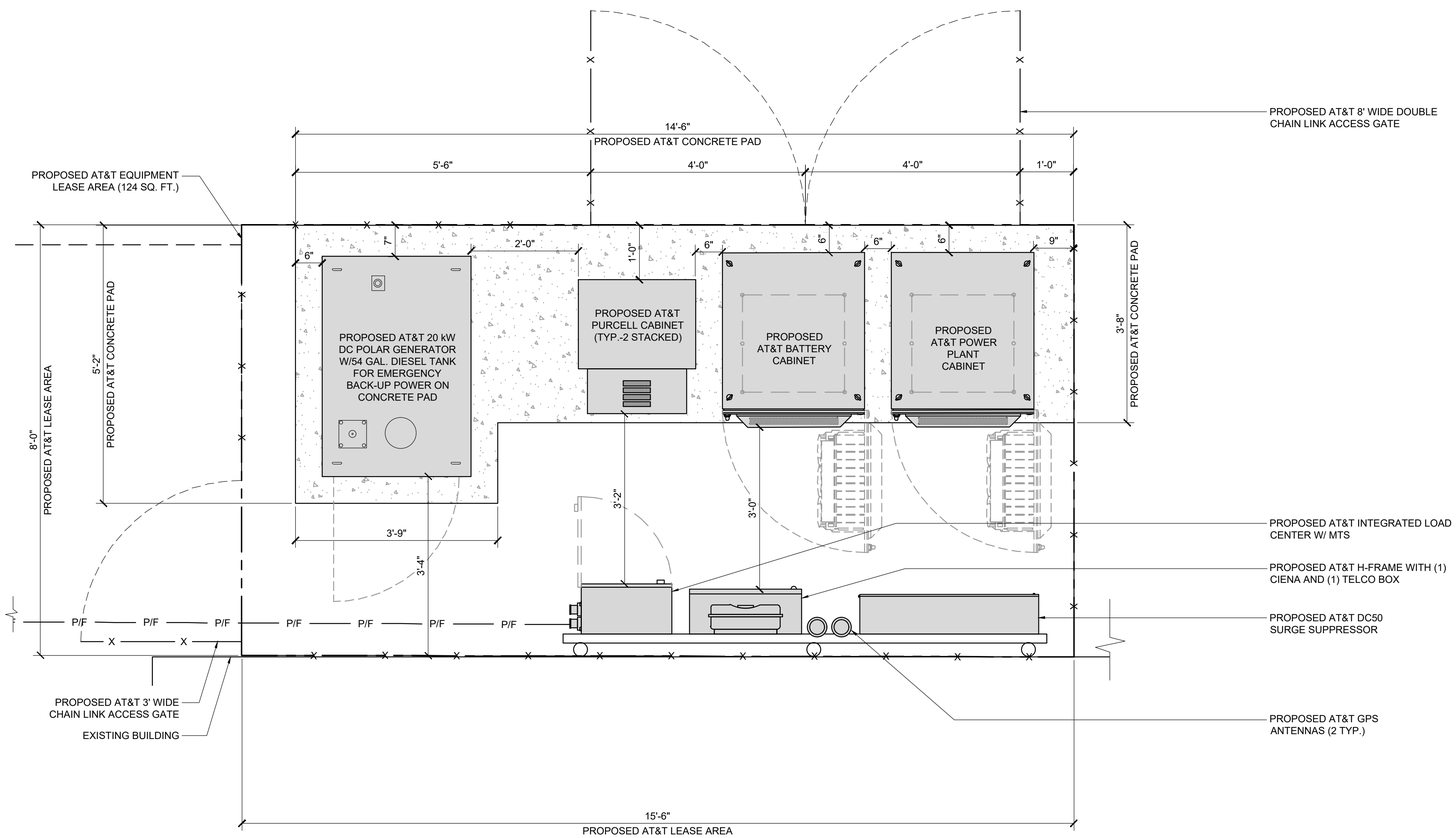

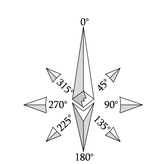

EQUIPMENT PLAN

SCALE	
3/4"=1'-0"	1" 0 6" 1' 2' 4'

1

EUKON_AT&T_90CD_ROOFTOP TEMPLATE_V1_11-18-22

at&t

1452 EDINGER AVE.
3RD FLOOR
TUSTIN, CA 92780

Eukon
an SFC Communications, Inc. Company
65 POST, SUITE 1000
IRVINE, CA 92618
TEL: (949) 553-8566
www.eukongroup.com

NOT FOR CONSTRUCTION

IT IS A VIOLATION OF LAW FOR ANY PERSON, UNLESS THEY ARE ACTING UNDER THE DIRECTION OF THE LICENSED PROFESSIONAL ENGINEER, TO ALTER THIS DOCUMENT.

DRAWN BY:	UTILITIES CHECKED BY:	A&E CHECKED BY:
MG	GD	IB

ZONING DRAWINGS

SUBMITTALS

REV	DATE	DESCRIPTION
A	09/03/24	90% ZONING DRAWINGS
0	10/09/24	100% ZONING DRAWINGS

PROJECT INFORMATION

CL00010

13535 VICTORY BLVD.
VAN NUYS, CA 91401

SHEET TITLE

EQUIPMENT PLAN

SHEET NUMBER

A-2

NOTE:

1. IF DIMENSIONS SHOWN ON PLAN DO NOT SCALE CORRECTLY, CHECK FOR REDUCTION OR ENLARGEMENT FROM ORIGINAL PLANS.
2. CONTRACTOR SHALL FIELD VERIFY ALL DIMENSIONS.
3. ANTENNA AND MW AT&T SPECIFICATIONS REFER TO ANTENNA SCHEDULE AND TO FINAL CONSTRUCTION RFDS FOR ALL RF DETAILS.

NOT USED | 4

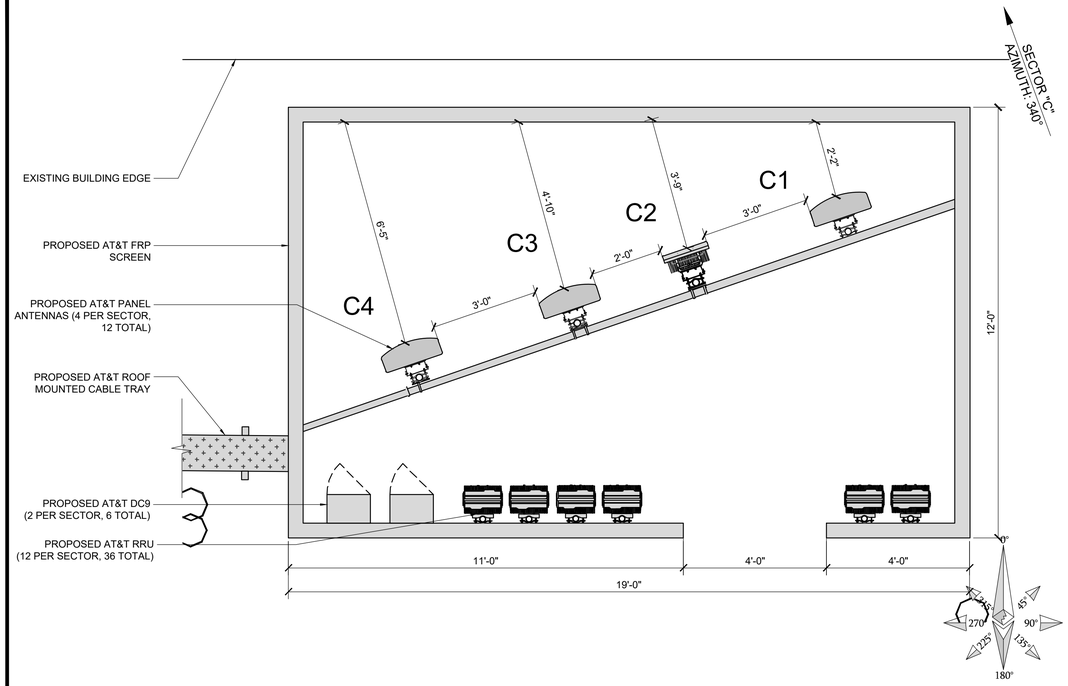

ANTENNA PLAN AT SECTOR "C" | SCALE 1/2"=1'-0" | 2

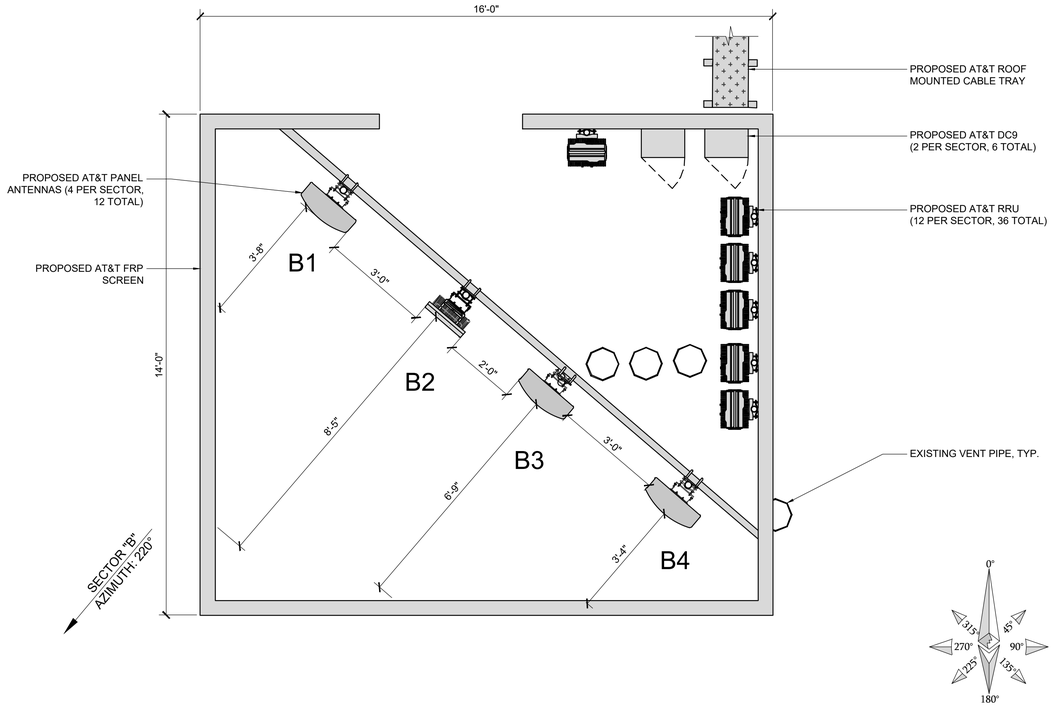

ANTENNA PLAN AT SECTOR "B" | SCALE 1/2"=1'-0" | 3

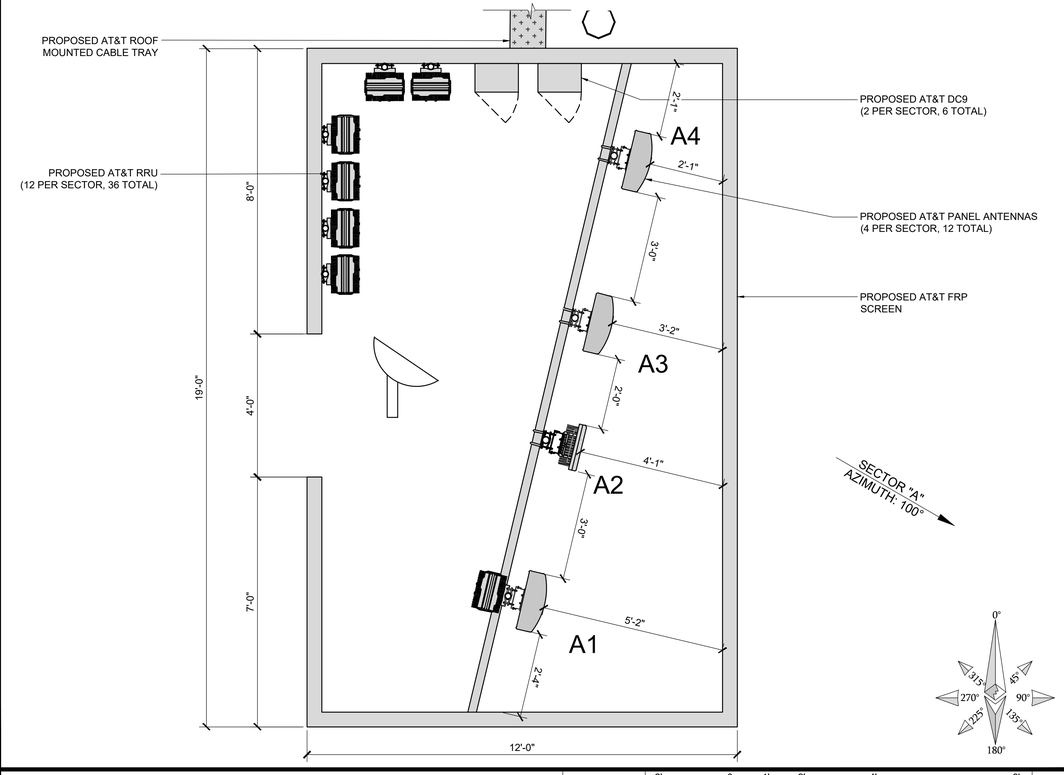

ANTENNA PLAN AT SECTOR "A" | SCALE 1/2"=1'-0" | 1

at&t

1452 EDINGER AVE.
3RD FLOOR
TUSTIN, CA 92780

Eukon
an SFC Communications, Inc. Company
65 POST, SUITE 1000
IRVINE, CA 92618
TEL: (949) 553-8566
www.eukongroup.com

NOT FOR CONSTRUCTION

IT IS A VIOLATION OF LAW FOR ANY PERSON, UNLESS THEY ARE ACTING UNDER THE DIRECTION OF THE LICENSED PROFESSIONAL ENGINEER, TO ALTER THIS DOCUMENT.

DRAWN BY:	UTILITIES CHECKED BY:	A&E CHECKED BY:
MG	GD	IB

ZONING DRAWINGS

SUBMITTALS

REV	DATE	DESCRIPTION
A	09/03/24	90% ZONING DRAWINGS
0	10/09/24	100% ZONING DRAWINGS

PROJECT INFORMATION

CL00010

13535 VICTORY BLVD.
VAN NUYS, CA 91401

SHEET TITLE

ANTENNA PLANS

SHEET NUMBER

A-3

ANTENNA SCHEDULE (VERIFY WITH CURRENT RFDS)

	SECTOR	TECHNOLOGY	ANTENNA MODEL	ANTENNA SIZE	ANTENNA AZIMUTH	RAD CENTER	TRANSMISSION CABLE LENGTH	TRANSMISSION CABLE QTY.
ALPHA SECTOR	A1	LTE	PANEL ANTENNA	8'-0"	100°	35'-6"	200'	2 FIBER + 6 DC POWER
	A2	C-BAND	PANEL ANTENNA	2'-7"	100°	38'-3"	200'	
		-	-	-	-	-	-	
	A3	LTE	PANEL ANTENNA	8'-0"	100°	35'-6"	200'	
	A4	LTE	PANEL ANTENNA	8'-0"	100°	35'-6"	200'	
BETA SECTOR	B1	LTE	PANEL ANTENNA	8'-0"	220°	35'-6"	170'	2 FIBER + 6 DC POWER
	B2	C-BAND	PANEL ANTENNA	2'-7"	220°	38'-3"	170'	
		-	-	-	-	-	-	
	B3	LTE	PANEL ANTENNA	8'-0"	220°	35'-6"	170'	
	B4	LTE	PANEL ANTENNA	8'-0"	220°	35'-6"	170'	
GAMMA SECTOR	C1	LTE	PANEL ANTENNA	8'-0"	340°	35'-6"	70'	2 FIBER + 6 DC POWER
	C2	C-BAND	PANEL ANTENNA	2'-7"	340°	38'-3"	70'	
		-	-	-	-	-	-	
	C3	LTE	PANEL ANTENNA	8'-0"	340°	35'-6"	70'	
	C4	LTE	PANEL ANTENNA	8'-0"	340°	35'-6"	70'	

NOTES TO CONTRACTOR:

1. CONTRACTOR IS TO REFER TO AT&T'S MOST CURRENT RADIO FREQUENCY DATA SHEET (RFDS) PRIOR TO CONSTRUCTION.
2. CABLE LENGTHS WERE DETERMINED BASED ON A VISUAL INSPECTION DURING SITE WALK. CONTRACTOR TO VERIFY ACTUAL LENGTH DURING PRE-CONSTRUCTION WALK.
3. CONTRACTOR TO USE ROSENBERGER FIBER LINE HANGER COMPONENTS (OR ENGINEER APPROVED EQUAL).
4. CONTRACTOR TO USE CABLES SPECIFIED (OR ENGINEER APPROVED EQUAL).

REMOTE RADIO UNIT SCHEDULE

	SECTOR	RRU TYPE	RRU LOCATION (DISTANCE FROM ANTENNA)	MINIMUM CLEARANCES ABOVE	MINIMUM CLEARANCES BELOW	MINIMUM CLEARANCES SIDES
ALPHA SECTOR	A1	(2) ERICSSON RRU (LTE)	±15'	16"	8"	0"
	A1	(2) ERICSSON RRU (LTE)	±15'	16"	8"	0"
	A2					
	A2					
	A3	(2) ERICSSON RRU (LTE)	±15'	16"	8"	0"
	A3	(2) ERICSSON RRU (LTE)	±15'	16"	8"	0"
	A4	(2) ERICSSON RRU (LTE)	±15'	16"	8"	0"
	A4	(2) ERICSSON RRU (LTE)	±15'	16"	8"	0"
BETA SECTOR	B1	(2) ERICSSON RRU (LTE)	±15'	16"	8"	0"
	B1	(2) ERICSSON RRU (LTE)	±15'	16"	8"	0"
	B2					
	B2					
	B3	(2) ERICSSON RRU (LTE)	±15'	16"	8"	0"
	B3	(2) ERICSSON RRU (LTE)	±15'	16"	8"	0"
	B4	(2) ERICSSON RRU (LTE)	±15'	16"	8"	0"
	B4	(2) ERICSSON RRU (LTE)	±15'	16"	8"	0"
GAMMA SECTOR	C1	(2) ERICSSON RRU (LTE)	±15'	16"	8"	0"
	C1	(2) ERICSSON RRU (LTE)	±15'	16"	8"	0"
	C2					
	C2					
	C3	(2) ERICSSON RRU (LTE)	±15'	16"	8"	0"
	C3	(2) ERICSSON RRU (LTE)	±15'	16"	8"	0"
	C4	(2) ERICSSON RRU (LTE)	±15'	16"	8"	0"
	C4	(2) ERICSSON RRU (LTE)	±15'	16"	8"	0"

SURGE SUPPRESSION SYSTEM SCHEDULE

	MFR.	PART NUMBER	QTY	LOCATION
SYSTEM	RAYCAP	DC50-48-60-96-50F	1	EQUIPMENT AT GRADE
	RAYCAP	DC9-48-60-24-PC16-EV	6	ADJACENT TO ANTENNAS ON ROOFTOP

ANTENNA AND RRU SCHEDULE | 2

NOT USED | 1

at&t

1452 EDINGER AVE.
3RD FLOOR
TUSTIN, CA 92780

Eukon
an SFC Communications, Inc. Company
65 POST, SUITE 1000
IRVINE, CA 92618
TEL: (949) 553-8566
www.eukongroup.com

NOT FOR CONSTRUCTION

IT IS A VIOLATION OF LAW FOR ANY PERSON, UNLESS THEY ARE ACTING UNDER THE DIRECTION OF THE LICENSED PROFESSIONAL ENGINEER, TO ALTER THIS DOCUMENT.

DRAWN BY:	UTILITIES CHECKED BY:	A&E CHECKED BY:
MG	GD	IB

ZONING DRAWINGS

SUBMITTALS

REV	DATE	DESCRIPTION
A	09/03/24	90% ZONING DRAWINGS
0	10/09/24	100% ZONING DRAWINGS

PROJECT INFORMATION

CL00010

13535 VICTORY BLVD.
VAN NUYS, CA 91401

SHEET TITLE

ANTENNA SCHEDULE

SHEET NUMBER

A-3.1

NOTE:

1. IF DIMENSIONS SHOWN ON PLAN DO NOT SCALE CORRECTLY, CHECK FOR REDUCTION OR ENLARGEMENT FROM ORIGINAL PLANS.
2. CONTRACTOR SHALL FIELD VERIFY ALL DIMENSIONS.

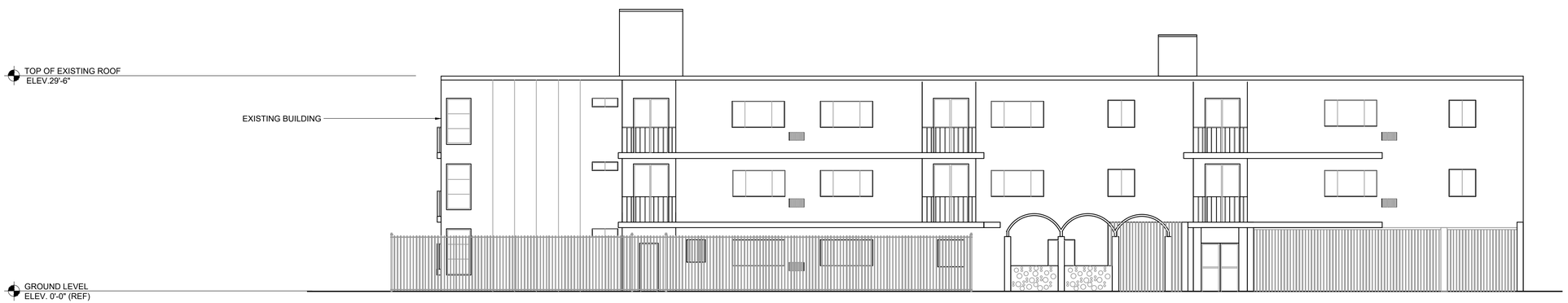

EXISTING SOUTH ELEVATION

SCALE 1/8"=1'-0" (8' 0 4' 8' 16' 32')

2

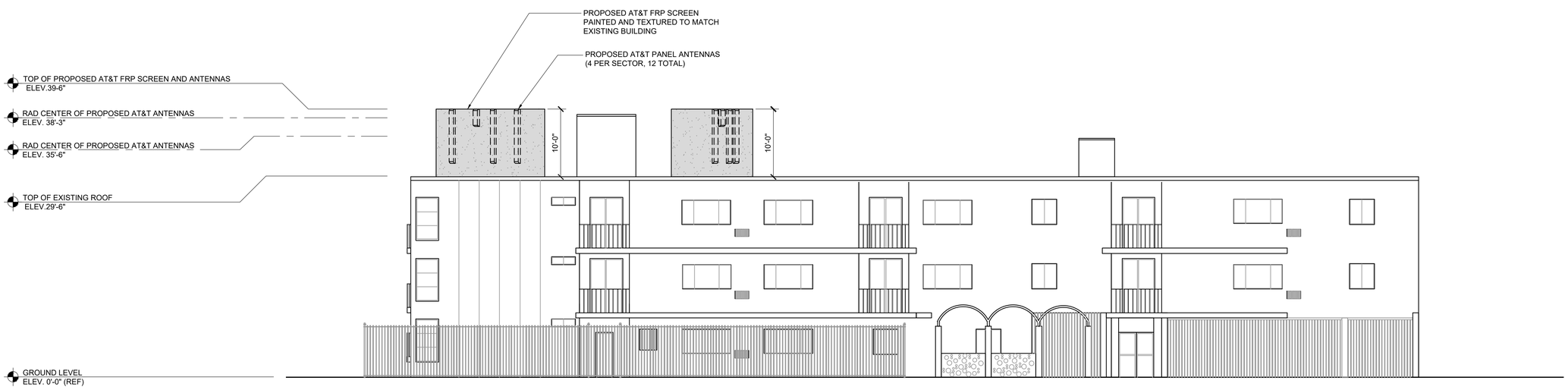

PROPOSED SOUTH ELEVATION

SCALE 1/8"=1'-0" (8' 0 4' 8' 16' 32')

1

at&t

1452 EDINGER AVE.
3RD FLOOR
TUSTIN, CA 92780

Eukon
an SFC Communications, Inc. Company
65 POST, SUITE 1000
IRVINE, CA 92618
TEL: (949) 553-8566
www.eukongroup.com

NOT FOR CONSTRUCTION

IT IS A VIOLATION OF LAW FOR ANY PERSON, UNLESS THEY ARE ACTING UNDER THE DIRECTION OF THE LICENSED PROFESSIONAL ENGINEER, TO ALTER THIS DOCUMENT.

DRAWN BY:	UTILITIES CHECKED BY:	A&E CHECKED BY:
MG	GD	IB

ZONING DRAWINGS

SUBMITTALS

REV	DATE	DESCRIPTION
A	09/03/24	90% ZONING DRAWINGS
0	10/09/24	100% ZONING DRAWINGS

PROJECT INFORMATION

CL00010

13535 VICTORY BLVD.
VAN NUYS, CA 91401

SHEET TITLE

ELEVATIONS

SHEET NUMBER

A-4

NOTE:

1. IF DIMENSIONS SHOWN ON PLAN DO NOT SCALE CORRECTLY, CHECK FOR REDUCTION OR ENLARGEMENT FROM ORIGINAL PLANS.
2. CONTRACTOR SHALL FIELD VERIFY ALL DIMENSIONS.

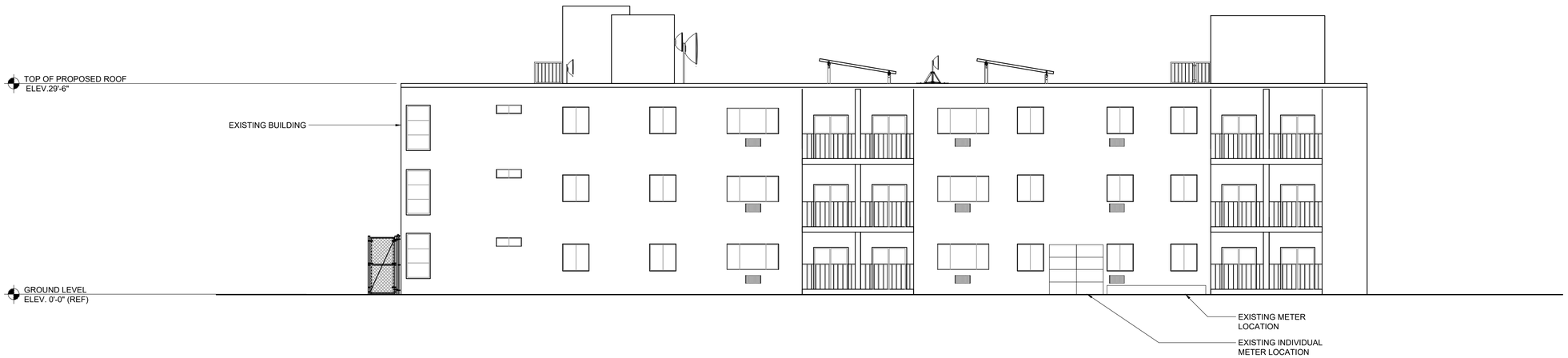

EXISTING EAST ELEVATION

SCALE 1/8"=1'-0" | 8' 0 4' 8' 16' 32' | 2

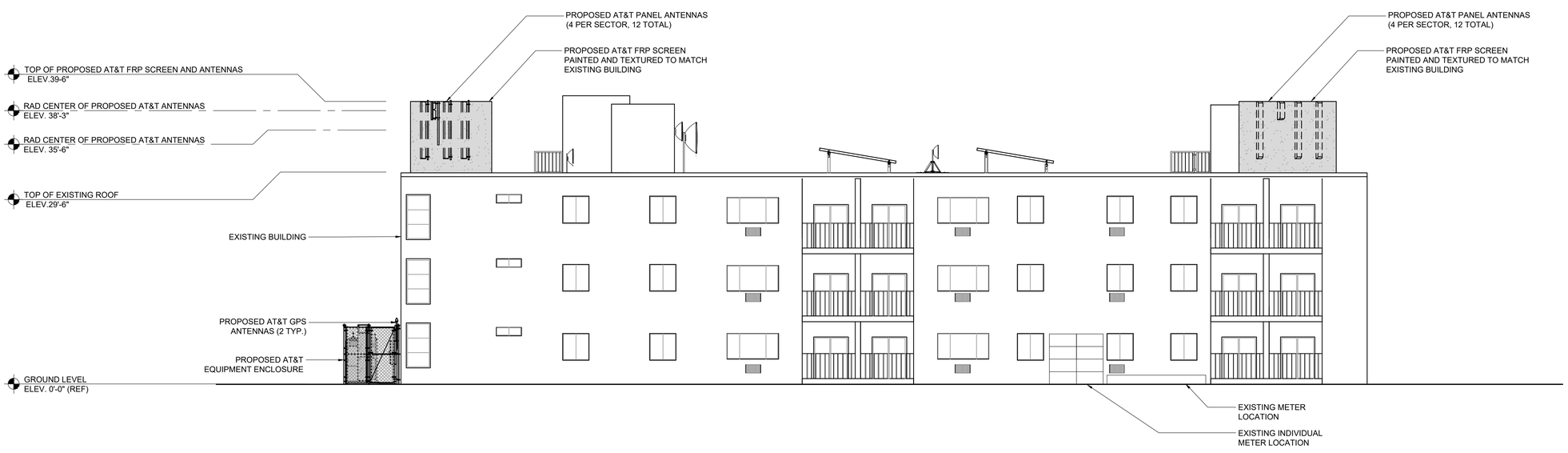

PROPOSED EAST ELEVATION

SCALE 1/8"=1'-0" | 8' 0 4' 8' 16' 32' | 1

EUKON_AT&T_90CD_ROOFTOP TEMPLATE_V1_11-18-22

at&t

1452 EDINGER AVE.
3RD FLOOR
TUSTIN, CA 92780

Eukon
an SFC Communications, Inc. Company
65 POST, SUITE 1000
IRVINE, CA 92618
TEL: (949) 553-8566
www.eukongroup.com

NOT FOR CONSTRUCTION

IT IS A VIOLATION OF LAW FOR ANY PERSON, UNLESS THEY ARE ACTING UNDER THE DIRECTION OF THE LICENSED PROFESSIONAL ENGINEER, TO ALTER THIS DOCUMENT.

DRAWN BY:	UTILITIES CHECKED BY:	A&E CHECKED BY:
MG	GD	IB

ZONING DRAWINGS

SUBMITTALS

REV	DATE	DESCRIPTION
A	09/03/24	90% ZONING DRAWINGS
0	10/09/24	100% ZONING DRAWINGS

PROJECT INFORMATION

CL00010

13535 VICTORY BLVD.
VAN NUYS, CA 91401

SHEET TITLE

ELEVATIONS

SHEET NUMBER

A-4.1