CODE COMPLIANCE

ALL WORK AND MATERIALS SHALL BE PERFORMED AND INSTALLED IN ACCORDANCE WITH THE CURRENT EDITIONS OF THE FOLLOWING CODES AS ADOPTED BY THE LOCAL GOVERNING AUTHORITIES. NOTHING IN THESE PLANS IS TO BE CONSTRUCTED TO PERMIT WORK NOT CONFORMING TO THESE CODES.

1. 2022 CALIFORNIA ADMINISTRATIVE CODE
2. 2022 CALIFORNIA BUILDING CODE
3. 2022 CALIFORNIA ELECTRIC CODE
4. 2022 CALIFORNIA MECHANICAL CODE
5. 2022 CALIFORNIA PLUMBING CODE
6. 2022 CALIFORNIA FIRE CODE
7. ANY LOCAL BUILDING CODE AMENDMENTS
8. CITY/COUNTY ORDINANCES
9. ANSI / TIA-222 STRUCTURAL CODE
10. NFPA 780 - LIGHTING PROTECTION CODE

HANDICAP REQUIREMENTS:
FACILITY IS UNMANNED AND NOT FOR HUMAN HABITATION, AND IS EXEMPTED FROM ACCESSIBILITY REQUIREMENTS IN ACCORDANCE WITH 2022 CALIFORNIA BUILDING CODE SECTION 11B-203.5.

THIS FACILITY IS UNMANNED AND NOT FOR HUMAN HABITATION. A TECHNICIAN WILL VISIT THE SITE AS REQUIRED FOR ROUTINE MAINTENANCE. THE PROJECT WILL NOT RESULT IN IN ANY SIGNIFICANT DISTURBANCE OR EFFECT ON DRAINAGE. NO SANITARY SEWER SERVICE, POTABLE WATER, OR TRASH DISPOSAL IS REQUIRED AND NO COMMERCIAL SIGNAGE IS NEW.

GENERAL NOTES

THIS FACILITY IS UNMANNED AND NOT FOR HUMAN HABITATION. A TECHNICIAN WILL VISIT THE SITE AS REQUIRED FOR ROUTINE MAINTENANCE. THE PROJECT WILL NOT RESULT IN IN ANY SIGNIFICANT DISTURBANCE OR EFFECT ON DRAINAGE. NO SANITARY SEWER SERVICE, POTABLE WATER, OR TRASH DISPOSAL IS REQUIRED AND NO COMMERCIAL SIGNAGE IS NEW.

IF CONTRACTOR ENCOUNTERS CONDITIONS IN FIELD, EITHER UNFORESEEN OR IN SOME MANNER IN CONFLICT WITH THESE DRAWINGS, THE CONTRACTOR SHALL NOTIFY THE REGISTERED DESIGN PROFESSIONAL OF SUCH CONDITIONS IN WRITING AND SHALL ACKNOWLEDGE ANY WORK DONE OUTSIDE OF JURISDICTIONAL PERMITTED PLANS IS DONE AT CONTRACTORS OWN RISK.

FOR "SPECIAL INSPECTIONS" SPECIFIC TO THIS PROJECT PURSUANT TO CBC SECTION 1704.3, SEE SHEET T-4, "STATEMENT OF SPECIAL INSPECTIONS"

SUBCONTRACTOR SHALL VERIFY ALL PLANS & EXISTING DIMENSIONS & CONDITIONS ON THE JOB SITE & SHALL IMMEDIATELY NOTIFY THE ENGINEER IN WRITING OF ANY DISCREPANCIES BEFORE PROCEEDING WITH THE WORK OR BE RESPONSIBLE FOR SAME.

FULL SIZE = 24"x36". ANY OTHER SIZE PRINT IS NOT ORIGINAL SCALE.

ALL INDICATED DIMENSIONS SHALL TAKE PRECEDENT OVER SCALED DIMENSIONS.

UNDERGROUND SERVICE ALERT
UTILITY NOTIFICATION CENTER OF CALIFORNIA
(800) 422-4133
WWW.CALIFORNIA811.ORG

CALL 2-14 WORKING DAYS UTILITY NOTIFICATION PRIOR TO CONSTRUCTION

SITE INFORMATION

PROPERTY OWNER:	--	TOWER OWNER:	--
ADDRESS:	-- --	ADDRESS:	-- --
COUNTY:	SAN DIEGO COUNTY	TOWER CO SITE ID:	--
ZONING JURISDICTION:	SAN DIEGO	TOWER APP NUMBER:	--
ZONING DISTRICT:	GENERAL COMMERCIAL	LATITUDE (NAD 83):	32.807196° PENDING TA
PARCEL NUMBER:	484-294-33 & 34	LONGITUDE (NAD 83):	-116.947729° PENDING TA
OCCUPANCY GROUP:	U		
CONSTRUCTION TYPE:	II-B		
POWER COMPANY:	SDG&E		
TELEPHONE COMPANY:	AT&T		
EQUIP. LEASE AREA:	408 S.F.		
ANT. LEASE AREA:	452 S.F.		
TOT. LEASE AREA:	860 S.F.		

PROJECT TEAM

PROJECT MANAGER:
AT&T
1452 EDINGER AVE, 3RD FLOOR
TUSTIN, CA 92780
CONTACT: TY LOGAN-BURKS
PHONE: (925) 549-4671
EMAIL: tl784a@att.com

SITE ACQUISITION:
EUKON GROUP
65 POST, SUITE 1000
IRVINE, CA 92618
CONTACT: JON SILVA
PHONE: (714) 393-7963
EMAIL: jon.silvia@eukongroup.com

A&E CONTACT:
EUKON GROUP
65 POST, SUITE 1000
IRVINE, CA 92618
CONTACT: RICH BRUNET
PHONE: (949) 899-5597
EMAIL: rich.brunet@eukongroup.com

RF ENGINEER:
AT&T
5855 COPLEY DR
SAN DIEGO CA 92111
CONTACT: CRISTIAN SOTO
PHONE: (858)361-8970
EMAIL: cs450g@att.com

ZONING:
EUKON GROUP
65 POST, SUITE 1000
IRVINE, CA 92618
CONTACT: DAVID ELLIOT
PHONE: (805) 637-7407
EMAIL: david.elliott@eukongroup.com

CONSTRUCTION:
AT&T
1452 EDINGER AVE, 3RD FLOOR
TUSTIN, CA 92780
CONTACT: DAVID TOVLIN
PHONE: (562) 243-5168
EMAIL: dt2777@att.com

Reviewed By:
Roberto Serrano
04/04/2025

Reviewed:
John Badilla
04/14/2025

SITE NUMBER: CAL01043
PACE#: TBD
FA#: 16582336
USID#: 500854

PROJECT: NSB
SITE TYPE: MONO BROADLEAF
SITE ADDRESS: 1013 BROADWAY
EL CAJON, CA 92021

VICINITY MAP

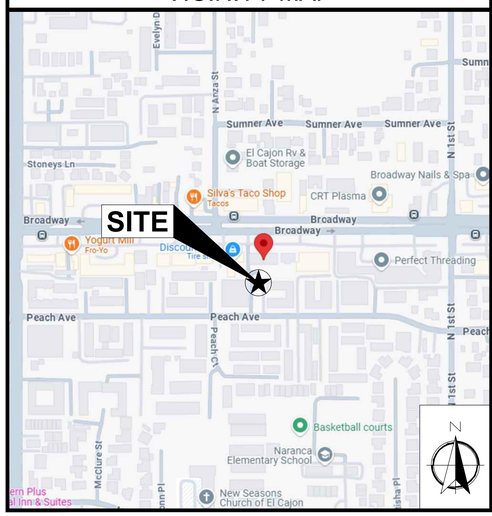

AERIAL VIEW

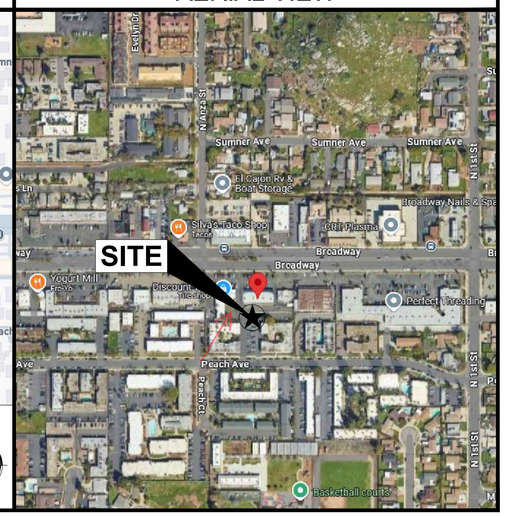

DRIVING DIRECTIONS

DIRECTIONS FROM AT&T OFFICE AT 1452 EDINGER AVE, TUSTIN, CA 92780

1. DEPART 1452 EDINGER AVE AND HEAD NORTH ON EDINGER AVE. TOWARDS I-5 SOUTH.
2. TURN RIGHT TO MERGE ONTO I-5 S TOWARD SAN DIEGO.
3. MERGE ONTO I-5 S & CONTINUE STRAIGHT TO STAY ON I-5 S
4. CONTINUE STRAIGHT ONTO I-805 S (SIGNS FOR INTERSTATE 805 S/CHULA VIS)
5. USE THE RIGHT 2 LANES TO TAKE EXIT 23 FOR CA-52
6. MERGE ONTO CA-52 E
7. USE THE RIGHT 2 LANES TO TAKE EXIT 18B TO MERGE ONTO CA-67 S TOWARD EL CAJON
8. TAKE EXIT 1C FOR BROADWAY/FLETCHER PKWY
9. TURN LEFT ONTO BROADWAY
10. TURN RIGHT
11. TURN LEFT
12. DESTINATION WILL BE ON THE RIGH

APPROVALS

THE FOLLOWING PARTIES HEREBY APPROVE AND ACCEPT THESE DOCUMENTS & AUTHORIZE THE SUBCONTRACTOR TO PROCEED WITH THE ZONING DESCRIBED HEREIN. ALL DOCUMENTS ARE SUBJECT TO REVIEW BY THE LOCAL BUILDING DEPARTMENT & MAY IMPOSE CHANGES OR MODIFICATIONS.

APPROVED BY:	DATE:
AT&T RF ENGINEER:	
AT&T OPERATIONS:	
SAQ MANAGER:	
PROJECT MANAGER:	
ZONING VENDOR:	
LEASING VENDOR:	
ZONING MANAGER:	
PROPERTY OWNER:	

PROJECT DESCRIPTION

AT&T WIRELESS PROPOSES TO INSTALL A WIRELESS COMMUNICATIONS FACILITY. THE SCOPE WILL CONSIST OF THE FOLLOWING:

- (1) PROPOSED 35'-0" HIGH MONO BROADLEAF
- (12) PROPOSED AT&T PANEL ANTENNAS
- (36) PROPOSED AT&T RRUS
- (6) PROPOSED AT&T DC9 SURGE SUPPRESSORS
- (1) PROPOSED WROUGHT IRON FENCE EQUIPMENT ENCLOSURE
- (1) PROPOSED AT&T DC50 SURGE SUPPRESSOR
- (2) PROPOSED AT&T GPS ANTENNAS
- (1) PROPOSED AT&T WALK UP CABINET (W.U.C)
- (2) PROPOSED AT&T UTILITY TRENCHES
- (1) PROPOSED AT&T CIENA PANEL
- (1) PROPOSED AT&T TELCO BOX
- (1) PROPOSED AT&T ELECTRICAL PANEL

9

Is generator not required?

SHEET INDEX

SHEET	DESCRIPTION	REV
T-1	TITLE SHEET	A
LS-1	TOPOGRAPHIC SURVEY	1
A-1	SITE PLAN	A
A-1.1	ENLARGED SITE PLAN	A
A-2	EQUIPMENT PLAN	A
A-3	ANTENNA PLAN AND SCHEDULE	A
A-4	ELEVATIONS	A

at&t
1452 EDINGER AVE.
3RD FLOOR
TUSTIN, CA 92780

Eukon
an SFC Communications, Inc. Company
65 POST, SUITE 1000
IRVINE, CA 92618
TEL: (949) 553-8566
www.eukongroup.com

NOT FOR CONSTRUCTION

IT IS A VIOLATION OF LAW FOR ANY PERSON, UNLESS THEY ARE ACTING UNDER THE DIRECTION OF THE LICENSED PROFESSIONAL ENGINEER, TO ALTER THIS DOCUMENT.

DRAWN BY:	UTILITIES CHECKED BY:	A&E CHECKED BY:
BA	--	--

ZONING DRAWINGS

SUBMITTALS

REV	DATE	DESCRIPTION
A	03/25/25	90% ZONING DRAWINGS

PROJECT INFORMATION

CAL01043

1013 BROADWAY
EL CAJON, CA 92021

SHEET TITLE

TITLE SHEET

SHEET NUMBER

T-1

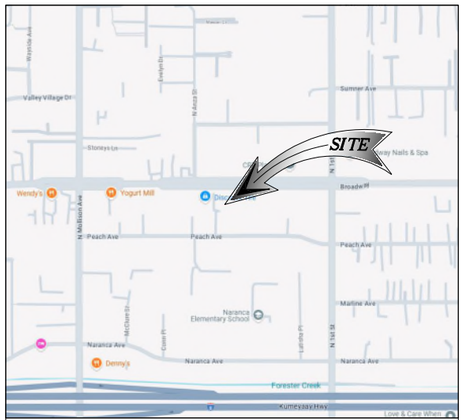

VICINITY MAP

APN
484-294-33 & 484-294-34

SITE ADDRESS
1013 BROADWAY, EL CAJON, CA 92021

TITLE REPORT
NO TITLE REPORT HAS BEEN ISSUED DURING THE TIME OF SURVEY.

BASIS OF BEARING
BEARINGS SHOWN HEREON ARE BASED UPON U.S. STATE PLANE NAD83 COORDINATE SYSTEM CALIFORNIA STATE PLANE COORDINATE ZONE SIX, DETERMINED BY GPS OBSERVATIONS.

BENCHMARK
ELEVATIONS ARE BASED ON CRTN (CSRC) NETWORK BROADCAST COORDINATES.

FLOODZONE
SITE IS LOCATED IN FLOOD ZONE "X" AS PER F.I.R.M. MAP NO. 06073C1662G EFFECTIVE DATE 05/16/2012.

NOTES:

1. THIS IS NOT A BOUNDARY SURVEY. THIS IS A SPECIALIZED TOPOGRAPHIC MAP. THE PROPERTY LINES AND EASEMENTS SHOWN HEREON ARE FROM RECORD INFORMATION AS NOTED HEREON. CELLSITE CONCEPTS TRANSLATED THE TOPOGRAPHIC SURVEY TO RECORD INFORMATION USING FOUND MONUMENTS SHOWN HEREON. THE LOCATION OF PROPERTY LINES SHOWN HEREON ARE APPROXIMATE AND FOR INFORMATIONAL PURPOSES ONLY. THEY ARE NOT TO BE RELIED UPON AS THE ACTUAL BOUNDARY LINES.
2. ANY CHANGES MADE TO THE INFORMATION ON THIS PLAN, WITHOUT THE WRITTEN CONSENT OF CELLSITE CONCEPTS, RELIEVES CELLSITE CONCEPTS OF ANY AND ALL LIABILITY.
3. THE HEIGHTS AND ELEVATIONS FOR THE TREES, BUSHES AND OTHER LIVING PLANTS SHOWN HEREON, SHOULD BE CONSIDERED APPROXIMATE (+/-) AND ONLY FOR THE DATE OF THIS SURVEY. THEY ARE PROVIDED AS A GENERAL REFERENCE AND SHOULD NOT BE USED FOR DESIGN PURPOSES.
4. WRITTEN DIMENSIONS SHALL TAKE PREFERENCE OVER SCALED & SHALL BE VERIFIED ON THE JOB SITE. ANY DISCREPANCY SHALL BE BROUGHT TO THE NOTICE OF THE SURVEYOR PRIOR TO COMMENCEMENT OF ANY WORK.
5. FIELD SURVEY COMPLETED ON DECEMBER 20, 2024.

LEGENDS

	CENTER LINE	TT	TOP OF TREE
	PROPERTY LINE	TWP	TOP OF WOOD POST
	EASEMENT LINE	RE	ROOF EDGE
	CMU WALL		UTILITY POLE
	VINYL FENCE		PALM TREE
EP	EDGE OF PAVEMENT		TREE
EG	EXISTING GRADE		BUSH
FS	FINISH SURFACE		
FL	FLOW LINE		
LP	LIP OF GUTTER		
TC	TOP OF CURB		
TB	TOP OF BUILDING		
TW	TOP OF WALL		
TR	TOP OF ROOF		
TF	TOP OF FENCE		

MONUMENT

FD. CITY MONUMENT

PROPERTY LINES DERIVED FROM
PARCEL MAP NO. 9317 DATED OCTOBER 31, 1979
PARCEL MAP NO. 15306 DATED JULY 20, 1988

20' 0' 20' 40'
GRAPHIC SCALE: 1"=20'

LINE TABLE		
NO.	LENGTH	BEARING
L1	55.00'	N89°57'40"E

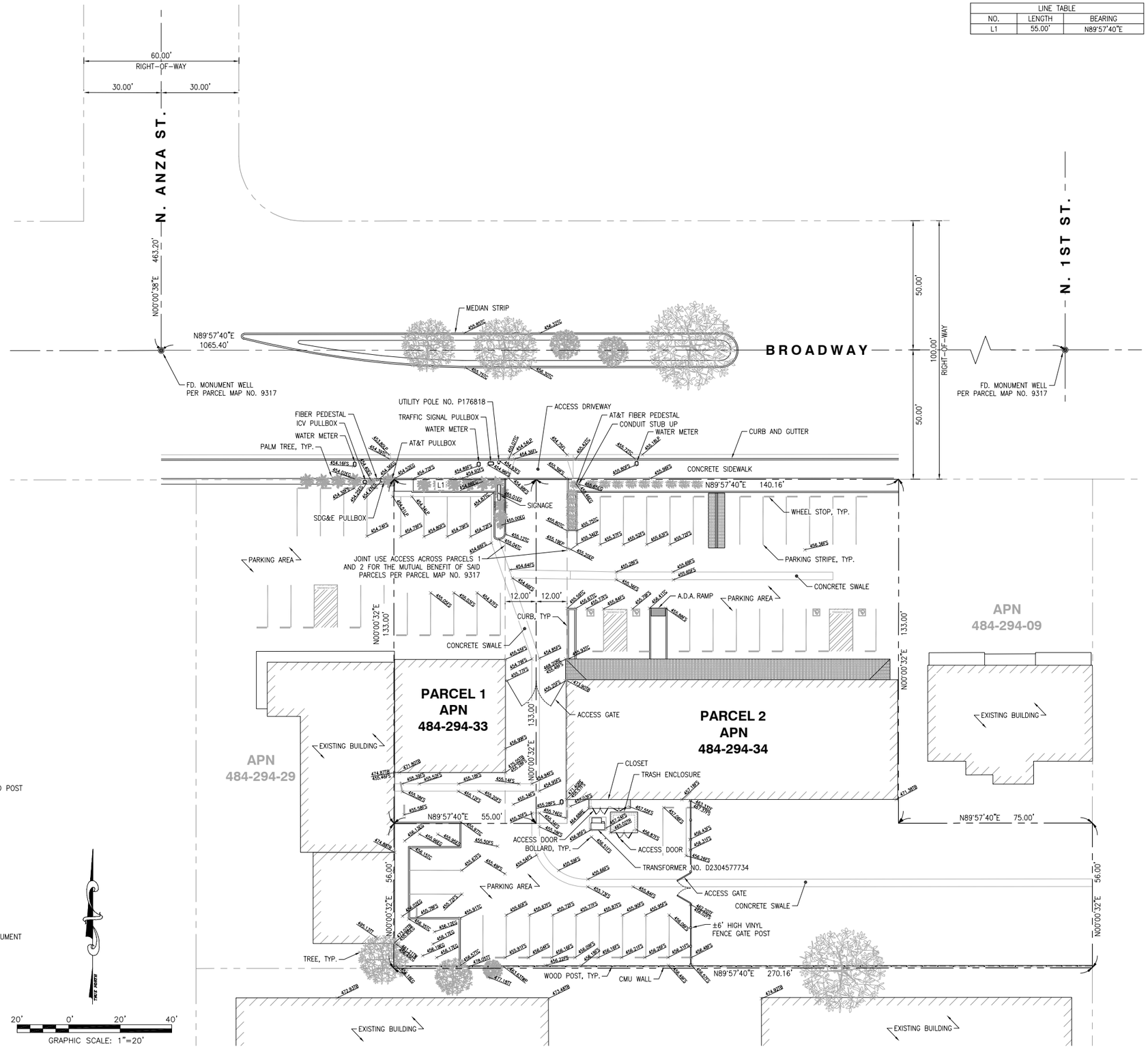

at&t
1452 EDINGER AVENUE
TUSTIN, CA 92780

Eukon
an SFC Communications, Inc. Company
65 POST, SUITE 1000
IRVINE, CA 92618
TEL: (949) 553-8566
www.eukongroup.com

cellsite concepts
16885 VIA DEL CAMPO CT., SUITE 318
SAN DIEGO, CA 92127
tel: (858) 432-4112 / (858) 432-4257

REV	DATE	DESCRIPTION
1	01/06/2025	PRELIMINARY SURVEY

ISSUED DATE:
JANUARY 06, 2025

ISSUED FOR:
PRELIMINARY SURVEY

LICENSURE:

PROJECT INFORMATION:
CAL01043
1013 BROADWAY,
EL CAJON, CA 92021

DRAWN BY: JRA
CHECKED BY: RH

SHEET TITLE:
TOPOGRAPHIC SURVEY

SHEET NUMBER:
LS-1

NOTES:

1. IF DIMENSIONS SHOWN ON PLAN DO NOT SCALE CORRECTLY, CHECK FOR REDUCTION OR ENLARGEMENT FROM ORIGINAL PLANS.
2. CONTRACTOR SHALL FIELD VERIFY ALL DIMENSIONS.
3. UTILITY DESIGNS AND ROUTES ARE PRELIMINARY PENDING FINAL DESIGN BY UTILITY PROVIDER.
4. THIS SITE PLAN IS NOT INTENDED TO BE A LAND SURVEY.

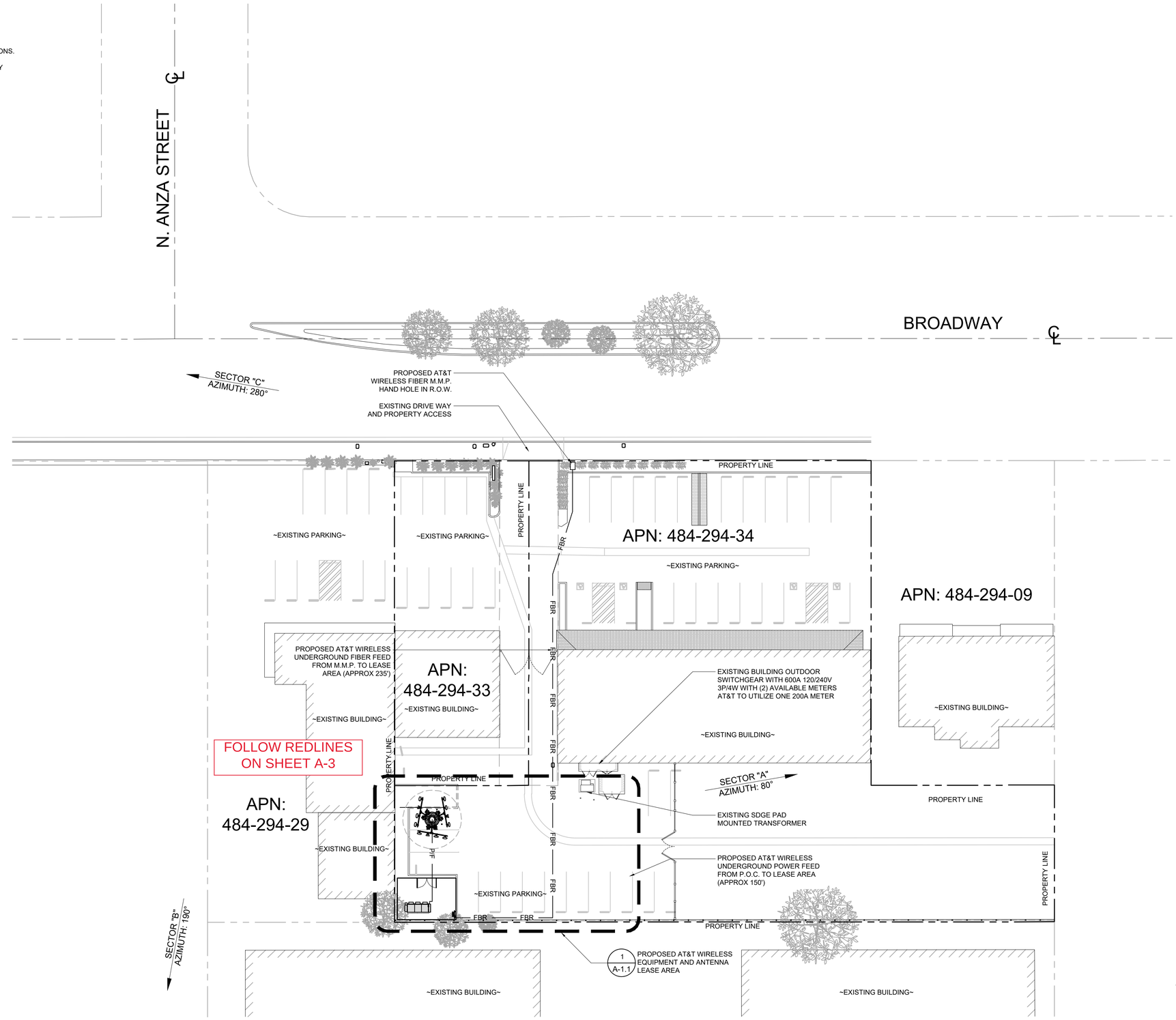

SITE PLAN

SCALE 1"=20'-0"

20' 0 10' 20' 40' 80'

1

EUKON_AT&T_90CD_MONOPOLE TEMPLATE_V3

at&t

1452 EDINGER AVE.
3RD FLOOR
TUSTIN, CA 92780

Eukon
an SFC Communications, Inc. Company
65 POST, SUITE 1000
IRVINE, CA 92618
TEL: (949) 553-8566
www.eukongroup.com

NOT FOR CONSTRUCTION

IT IS A VIOLATION OF LAW FOR ANY PERSON, UNLESS THEY ARE ACTING UNDER THE DIRECTION OF THE LICENSED PROFESSIONAL ENGINEER, TO ALTER THIS DOCUMENT.

DRAWN BY:	UTILITIES CHECKED BY:	A&E CHECKED BY:
BA	--	--

ZONING DRAWINGS

SUBMITTALS

REV	DATE	DESCRIPTION
A	03/25/25	90% ZONING DRAWINGS

PROJECT INFORMATION

CAL01043

1013 BROADWAY
EL CAJON, CA 92021

SHEET TITLE

SITE PLAN

SHEET NUMBER

A-1

NOTES:

1. IF DIMENSIONS SHOWN ON PLAN DO NOT SCALE CORRECTLY, CHECK FOR REDUCTION OR ENLARGEMENT FROM ORIGINAL PLANS.
2. CONTRACTOR SHALL FIELD VERIFY ALL DIMENSIONS.
3. THIS SITE PLAN IS NOT INTENDED TO BE A LAND SURVEY.

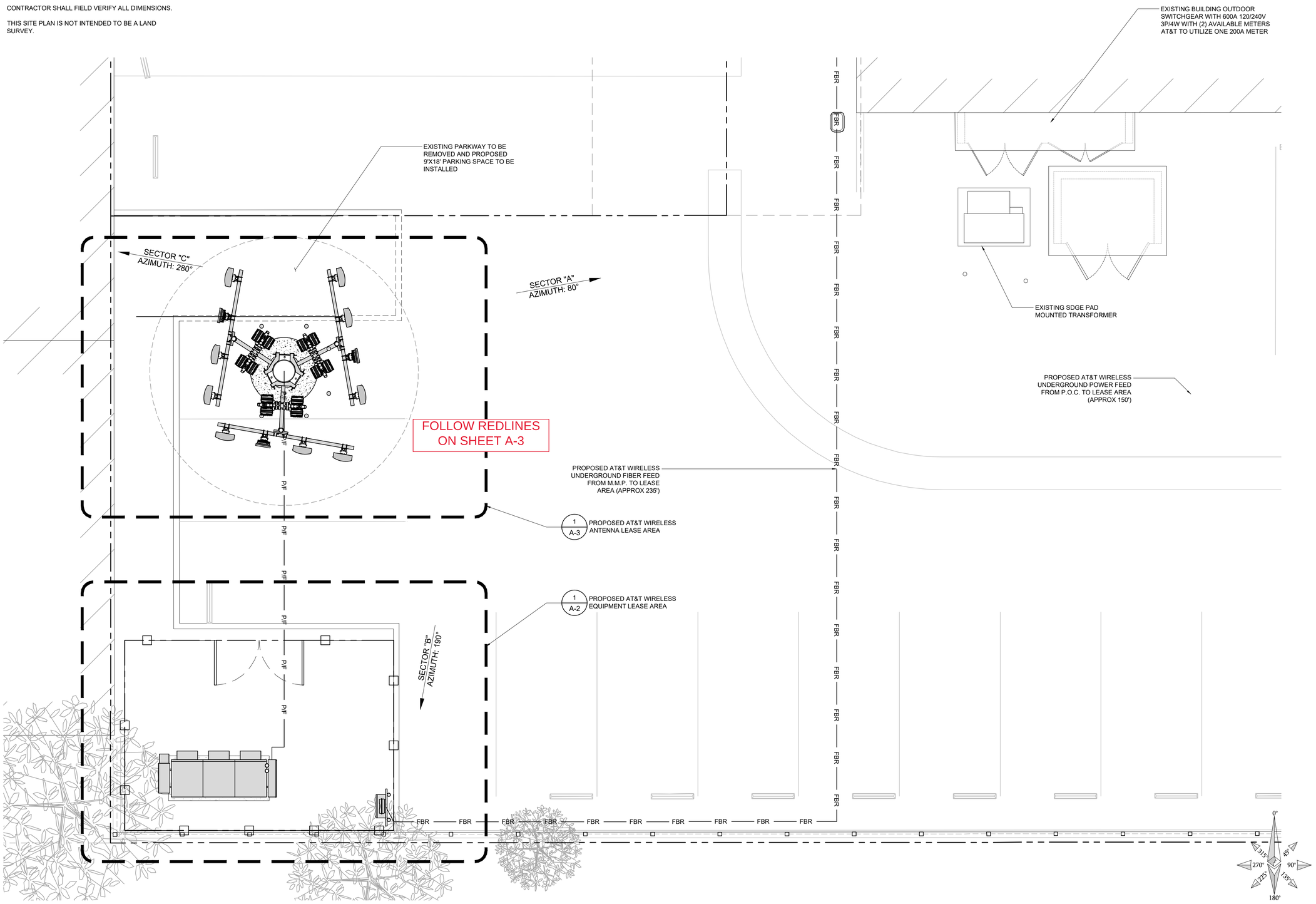

ENLARGED SITE PLAN

SCALE	
1/4"=1'-0"	4' 0 2' 4' 8' 16'

1

EUKON_AT&T_90CD_MONOPOLE TEMPLATE_V3

at&t

1452 EDINGER AVE.
3RD FLOOR
TUSTIN, CA 92780

Eukon
an SFC Communications, Inc. Company
65 POST, SUITE 1000
IRVINE, CA 92618
TEL: (949) 553-8566
www.eukongroup.com

NOT FOR CONSTRUCTION

IT IS A VIOLATION OF LAW FOR ANY PERSON, UNLESS THEY ARE ACTING UNDER THE DIRECTION OF THE LICENSED PROFESSIONAL ENGINEER, TO ALTER THIS DOCUMENT.

DRAWN BY:	UTILITIES CHECKED BY:	A&E CHECKED BY:
BA	--	--

ZONING DRAWINGS

SUBMITTALS

REV	DATE	DESCRIPTION
A	03/25/25	90% ZONING DRAWINGS

PROJECT INFORMATION

CAL01043

1013 BROADWAY
EL CAJON, CA 92021

SHEET TITLE

ENLARGED SITE PLAN

SHEET NUMBER

A-1.1

NOTE:

1. IF DIMENSIONS SHOWN ON PLAN DO NOT SCALE CORRECTLY, CHECK FOR REDUCTION OR ENLARGEMENT FROM ORIGINAL PLANS.

2. CONTRACTOR SHALL FIELD VERIFY ALL DIMENSIONS.

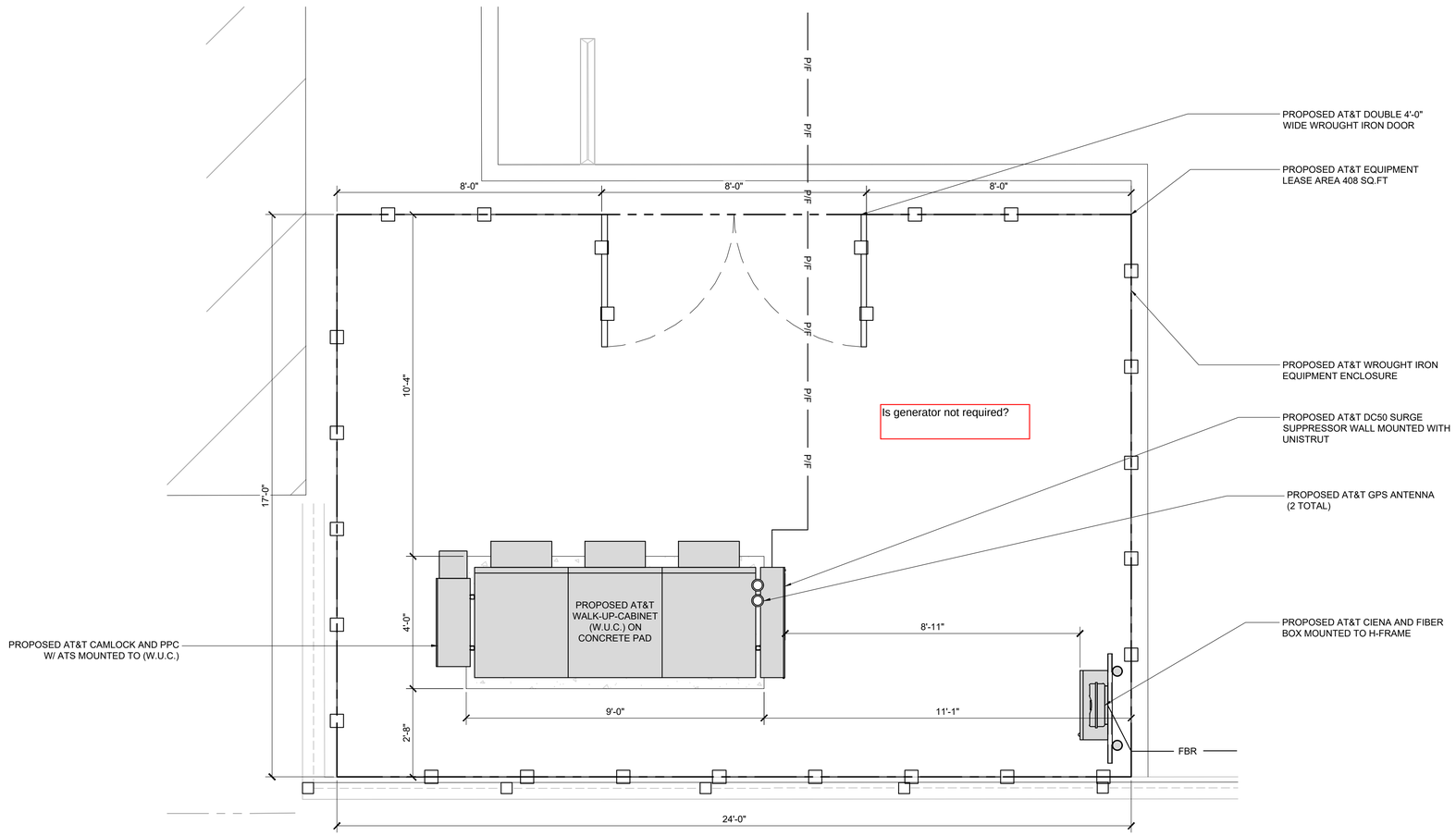

at&t

1452 EDINGER AVE.
3RD FLOOR
TUSTIN, CA 92780

Eukon
an SFC Communications, Inc. Company
65 POST, SUITE 1000
IRVINE, CA 92618
TEL: (949) 553-8566
www.eukongroup.com

NOT FOR CONSTRUCTION

IT IS A VIOLATION OF LAW FOR ANY PERSON, UNLESS THEY ARE ACTING UNDER THE DIRECTION OF THE LICENSED PROFESSIONAL ENGINEER, TO ALTER THIS DOCUMENT.

DRAWN BY:	UTILITIES CHECKED BY:	A&E CHECKED BY:
BA	--	--

ZONING DRAWINGS

SUBMITTALS

REV	DATE	DESCRIPTION
A	03/25/25	90% ZONING DRAWINGS

PROJECT INFORMATION

CAL01043

1013 BROADWAY
EL CAJON, CA 92021

SHEET TITLE

EQUIPMENT PLAN

SHEET NUMBER

A-2

EQUIPMENT PLAN

SCALE 1/2"=1'-0"

2' 0 1' 2' 4' 8'

1

EUKON_AT&T_90CD_MONOPOLE TEMPLATE_V3

ANTENNA SCHEDULE (VERIFY WITH CURRENT RFDS)

	SECTOR	TECHNOLOGY	ANTENNA MODEL	ANTENNA SIZE	ANTENNA AZIMUTH	RAD CENTER	TRANSMISSION CABLE LENGTH	TRANSMISSION CABLE QTY.
ALPHA SECTOR	A1	LTE	NNH4-65C-R6-V4	8'-0"	80°	30'-0"	-	2 FIBER + 6 DC POWER
	A2	FUTURE ANTENNA					-	
	A3	CBAND	AIR6472 B77G B77M	2'-7"	80°	30'-0"	-	
	A4	LTE	NNH4-65C-R6-V4	8'-0"	80°	30'-0"	-	
	-	-	-	-	-	-	-	
BETA SECTOR	B1	LTE	NNH4-65C-R6-V4	8'-0"	190°	30'-0"	-	2 FIBER + 6 DC POWER
	B2	C-BAND	AIR6472 B77G B77M	2'-7"	190°	32'-9"	-	
	B3	FUTURE ANTENNA					-	
	B4	LTE	NNH4-65C-R6-V4	8'-0"	190°	30'-0"	-	
	-	-	-	-	-	-	-	
GAMMA SECTOR	C1	LTE	NNH4-65C-R6-V4	8'-0"	280°	30'-0"	-	2 FIBER + 6 DC POWER
	C2	FUTURE ANTENNA					-	
	C3	LTE	NNH4-65C-R6-V4	8'-0"	280°	30'-0"	-	
	C4	CBAND	AIR6472 B77G B77M	2'-7"	280°	30'-0"	-	
	-	-	-	-	-	-	-	

NOTES TO CONTRACTOR:

1. CONTRACTOR IS TO REFER TO AT&T'S MOST CURRENT RADIO FREQUENCY DATA SHEET (RFDS) PRIOR TO CONSTRUCTION.
2. CABLE LENGTHS WERE DETERMINED BASED ON A VISUAL INSPECTION DURING SITE WALK. CONTRACTOR TO VERIFY ACTUAL LENGTH DURING PRE-CONSTRUCTION WALK.
3. CONTRACTOR TO USE ROSENBERGER FIBER LINE HANGER COMPONENTS (OR ENGINEER APPROVED EQUAL).
4. CONTRACTOR TO USE CABLES SPECIFIED (OR ENGINEER APPROVED EQUAL).

REMOTE RADIO UNIT SCHEDULE

	SECTOR	RRU TYPE	RRU LOCATION (DISTANCE FROM ANTENNA)	MINIMUM CLEARANCES ABOVE	BELOW	SIDES
ALPHA SECTOR	A1	(1) 4890 B25/B66	±15'	16"	8"	0"
	A1	(1) 4490 B5/B12	±15'	16"	8"	0"
	A2					
	A2					
	A3	(1) AIR6472 B77G B77M	±15'	16"	8"	0"
	A3	~~(2) ERICSSON RRU (LTE)~~	±15'	16"	8"	0"
	A4	(1) 4494 FNET B14	±15'	16"	8"	0"
	A4	~~(2) ERICSSON RRU (LTE)~~	±15'	16"	8"	0"
BETA SECTOR	B1	(1) 4494 FNET B14	±15'	16"	8"	0"
	B1	~~(2) ERICSSON RRU (LTE)~~	±15'	16"	8"	0"
	B2					
	B2					
	B3	(1) AIR6472 B77G B77M	±15'	16"	8"	0"
	B3	~~(2) ERICSSON RRU (LTE)~~	±15'	16"	8"	0"
	B4	(1) 4890 B25/B66	±15'	16"	8"	0"
	B4	(1) 4490 B5/B12	±15'	16"	8"	0"
GAMMA SECTOR	C1	(1) 4494 FNET B14	±15'	16"	8"	0"
	C1	~~(2) ERICSSON RRU (LTE)~~	±15'	16"	8"	0"
	C2					
	C2					
	C3	(1) 4890 B25/B66	±15'	16"	8"	0"
	C3	(1) 4490 B5/B12	±15'	16"	8"	0"
	C4	(1) AIR6472 B77G B77M	±15'	16"	8"	0"
	C4	~~(2) ERICSSON RRU (LTE)~~	±15'	16"	8"	0"

SURGE SUPPRESSION SYSTEM SCHEDULE

SYSTEM	MFR.	PART NUMBER	QTY	LOCATION
	RAYCAP	DC50-48-60-96-50F	1	MOUNTED ON PROPOSED W.U.C.
	RAYCAP	DC9-48-60-24-8C-EV	6	MOUNTED ON PROPOSED MONO BROAD LEAF

ANTENNA AND RRU SCHEDULE 2

NOTE:

1. IF DIMENSIONS SHOWN ON PLAN DO NOT SCALE CORRECTLY, CHECK FOR REDUCTION OR ENLARGEMENT FROM ORIGINAL PLANS.
2. CONTRACTOR SHALL FIELD VERIFY ALL DIMENSIONS.
3. ANTENNA AND MW AT&T SPECIFICATIONS REFER TO ANTENNA SCHEDULE AND TO FINAL CONSTRUCTION RFDS FOR ALL RF DETAILS.

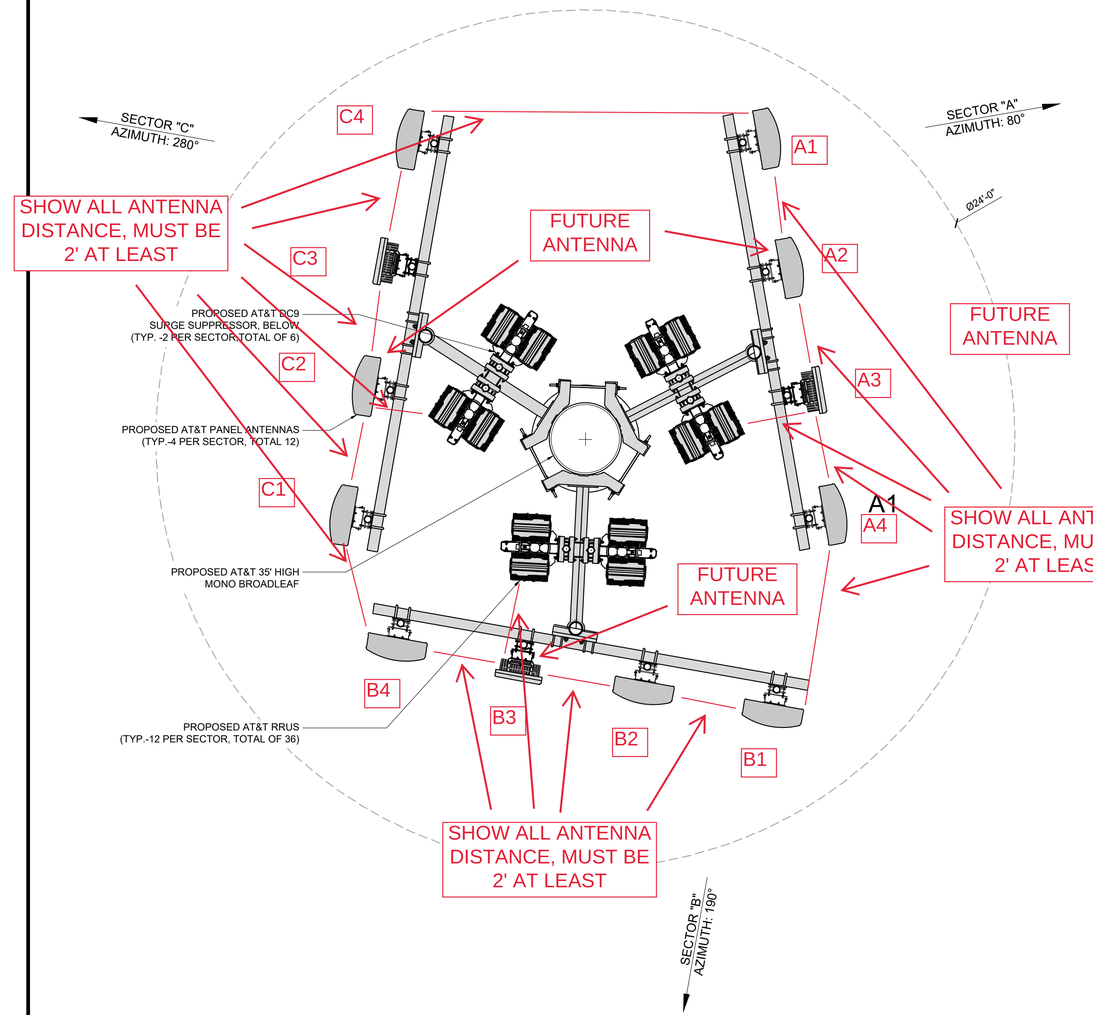

ANTENNA PLAN

SCALE 1/2"=1'-0"

2' 0 1' 2' 4' 8'

1

at&t
1452 EDINGER AVE.
3RD FLOOR
TUSTIN, CA 92780

Eukon
an SFC Communications, Inc. Company
65 POST, SUITE 1000
IRVINE, CA 92618
TEL: (949) 553-8566
www.eukongroup.com

NOT FOR CONSTRUCTION

IT IS A VIOLATION OF LAW FOR ANY PERSON, UNLESS THEY ARE ACTING UNDER THE DIRECTION OF THE LICENSED PROFESSIONAL ENGINEER, TO ALTER THIS DOCUMENT.

DRAWN BY:	UTILITIES CHECKED BY:	A&E CHECKED BY:
BA	--	--

ZONING DRAWINGS

SUBMITTALS

REV	DATE	DESCRIPTION
A	03/25/25	90% ZONING DRAWINGS

PROJECT INFORMATION

CAL01043

1013 BROADWAY
EL CAJON, CA 92021

SHEET TITLE

ANTENNA PLAN AND SCHEDULE

SHEET NUMBER

A-3

EUKON_AT&T_90CD_MONOPOLE TEMPLATE_V3

NOTE:

1. IF DIMENSIONS SHOWN ON PLAN DO NOT SCALE CORRECTLY, CHECK FOR REDUCTION OR ENLARGEMENT FROM ORIGINAL PLANS.
2. CONTRACTOR SHALL FIELD VERIFY ALL DIMENSIONS.

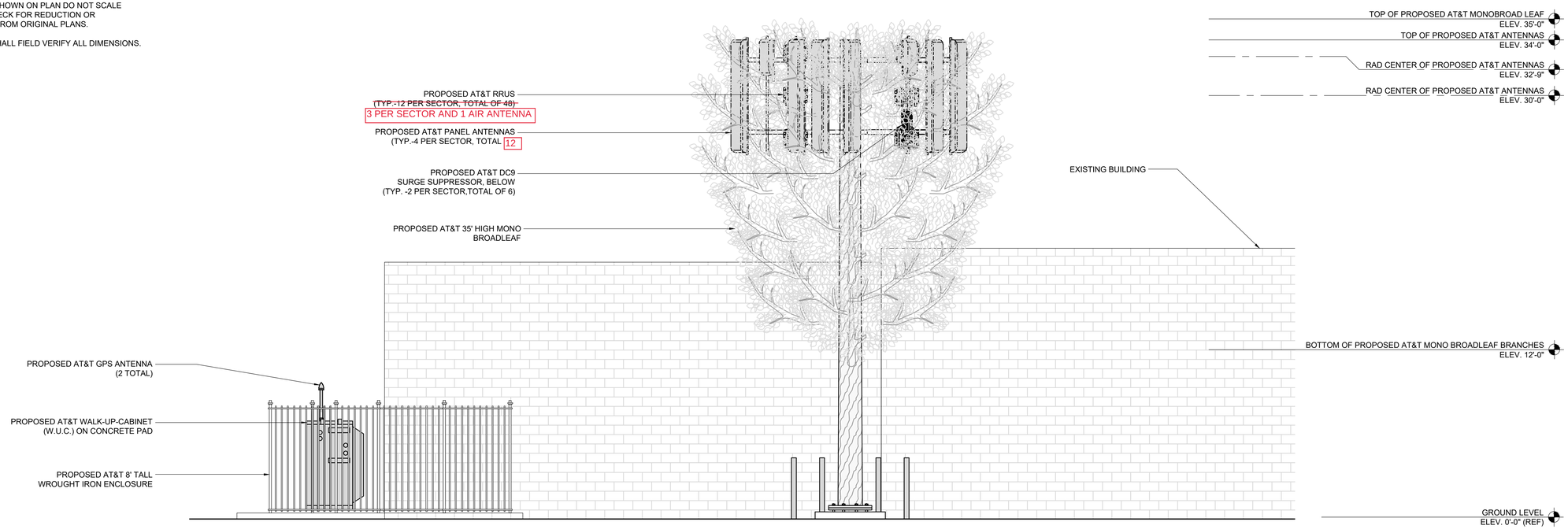

PROPOSED EAST ELEVATION

SCALE 1/4"=1'-0" (4' 0 2' 4' 8' 16')

2

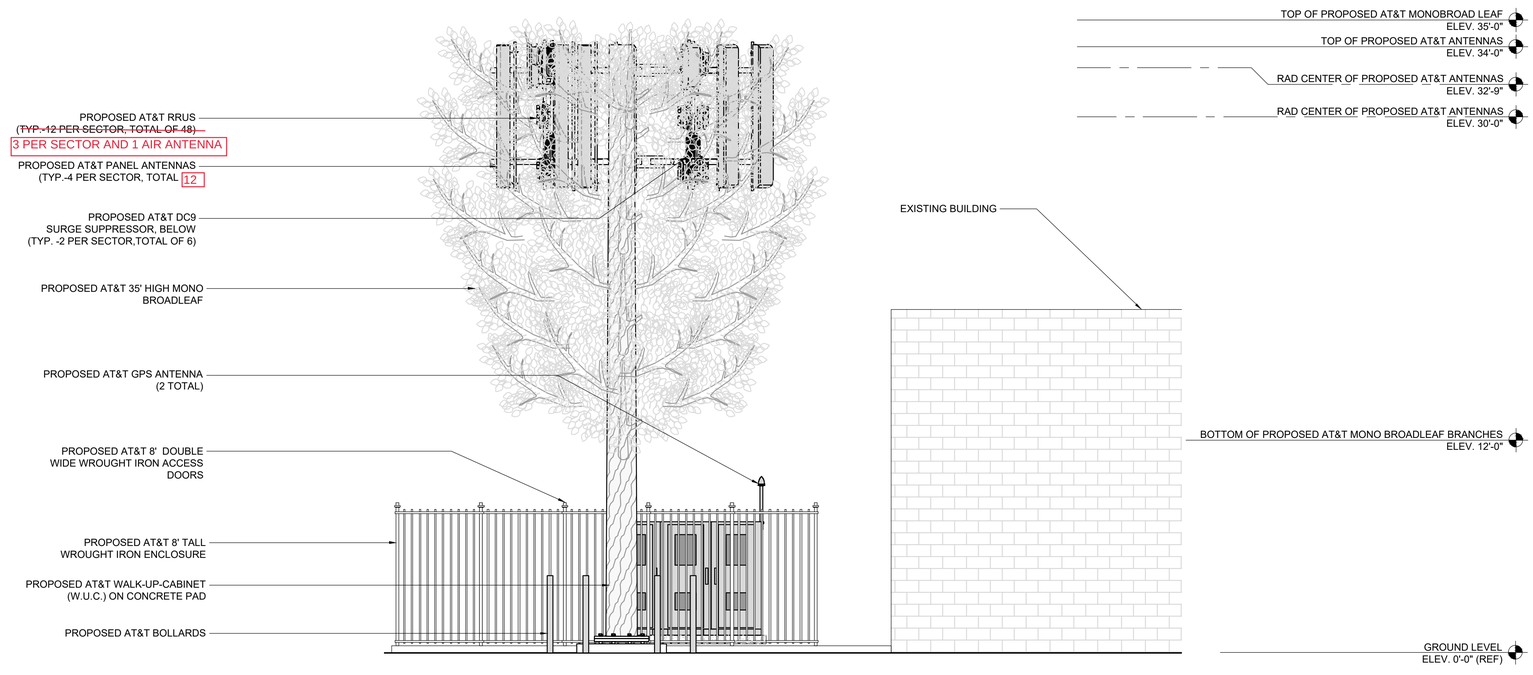

PROPOSED NORTH ELEVATION

SCALE 1/4"=1'-0" (4' 0 2' 4' 8' 16')

1

at&t

1452 EDINGER AVE.
3RD FLOOR
TUSTIN, CA 92780

Eukon
an SFC Communications, Inc. Company
65 POST, SUITE 1000
IRVINE, CA 92618
TEL: (949) 553-8566
www.eukongroup.com

NOT FOR CONSTRUCTION

IT IS A VIOLATION OF LAW FOR ANY PERSON, UNLESS THEY ARE ACTING UNDER THE DIRECTION OF THE LICENSED PROFESSIONAL ENGINEER, TO ALTER THIS DOCUMENT.

DRAWN BY:	UTILITIES CHECKED BY:	A&E CHECKED BY:
BA	--	--

ZONING DRAWINGS

SUBMITTALS

REV	DATE	DESCRIPTION
A	03/25/25	90% ZONING DRAWINGS

PROJECT INFORMATION

CAL01043

1013 BROADWAY
EL CAJON, CA 92021

SHEET TITLE

ELEVATIONS

SHEET NUMBER

A-4